1. geom_point − Scatter Plot

Iris: sepal length vs width by species

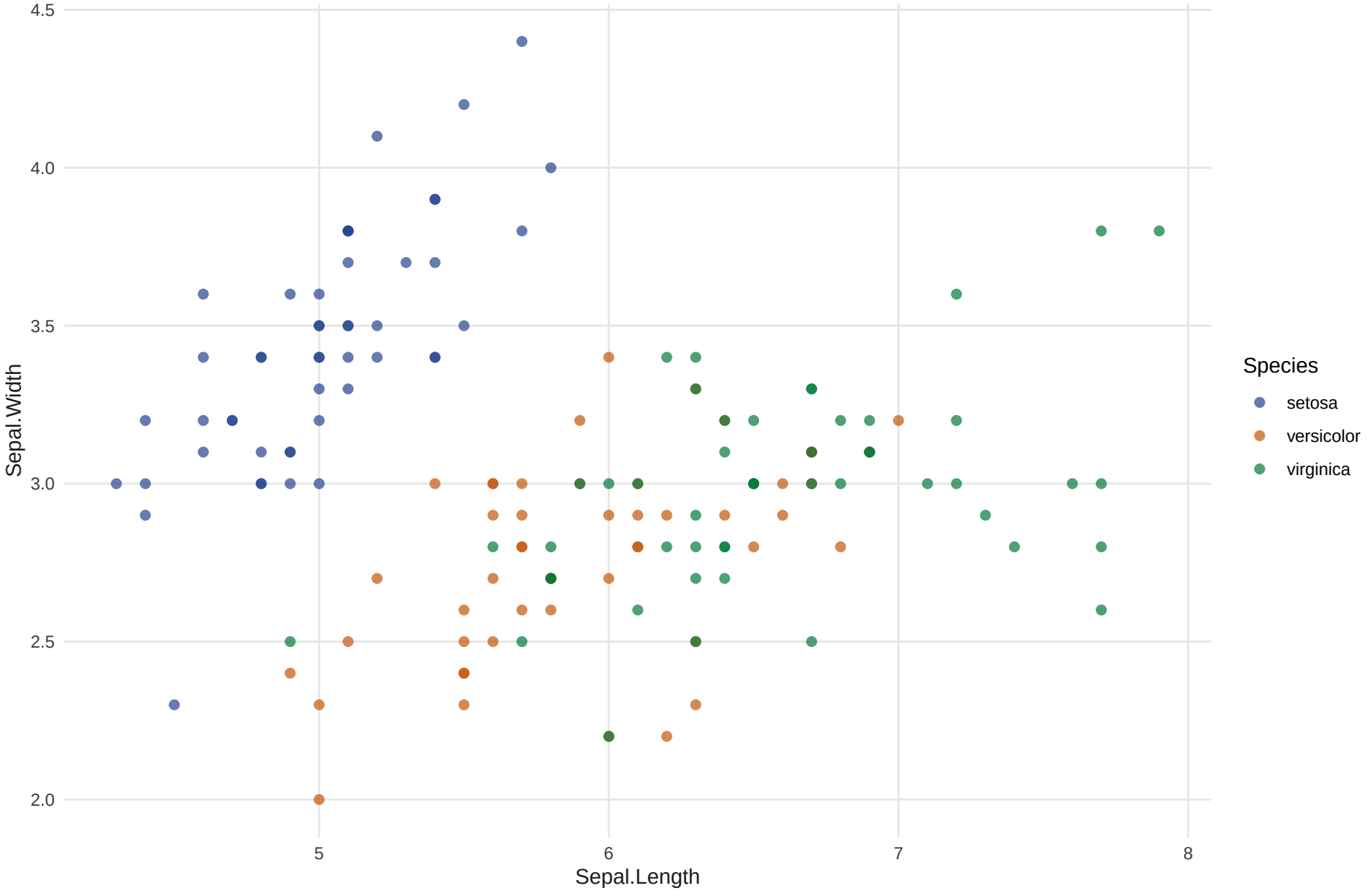

2. geom_jitter − Jittered Points

Petal width by species with random noise

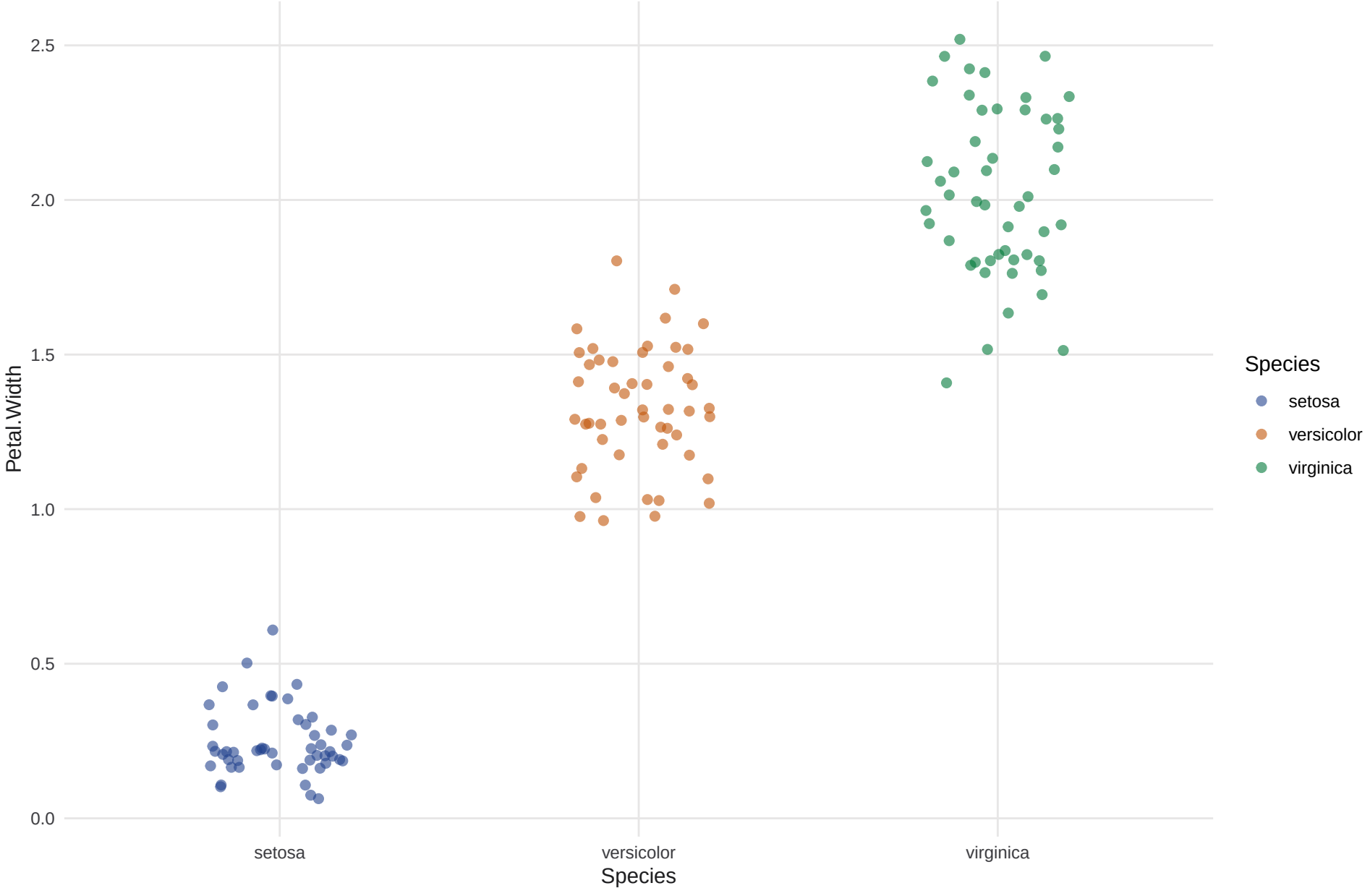

3. geom_count – Sized by Overlap Count

City vs highway mileage

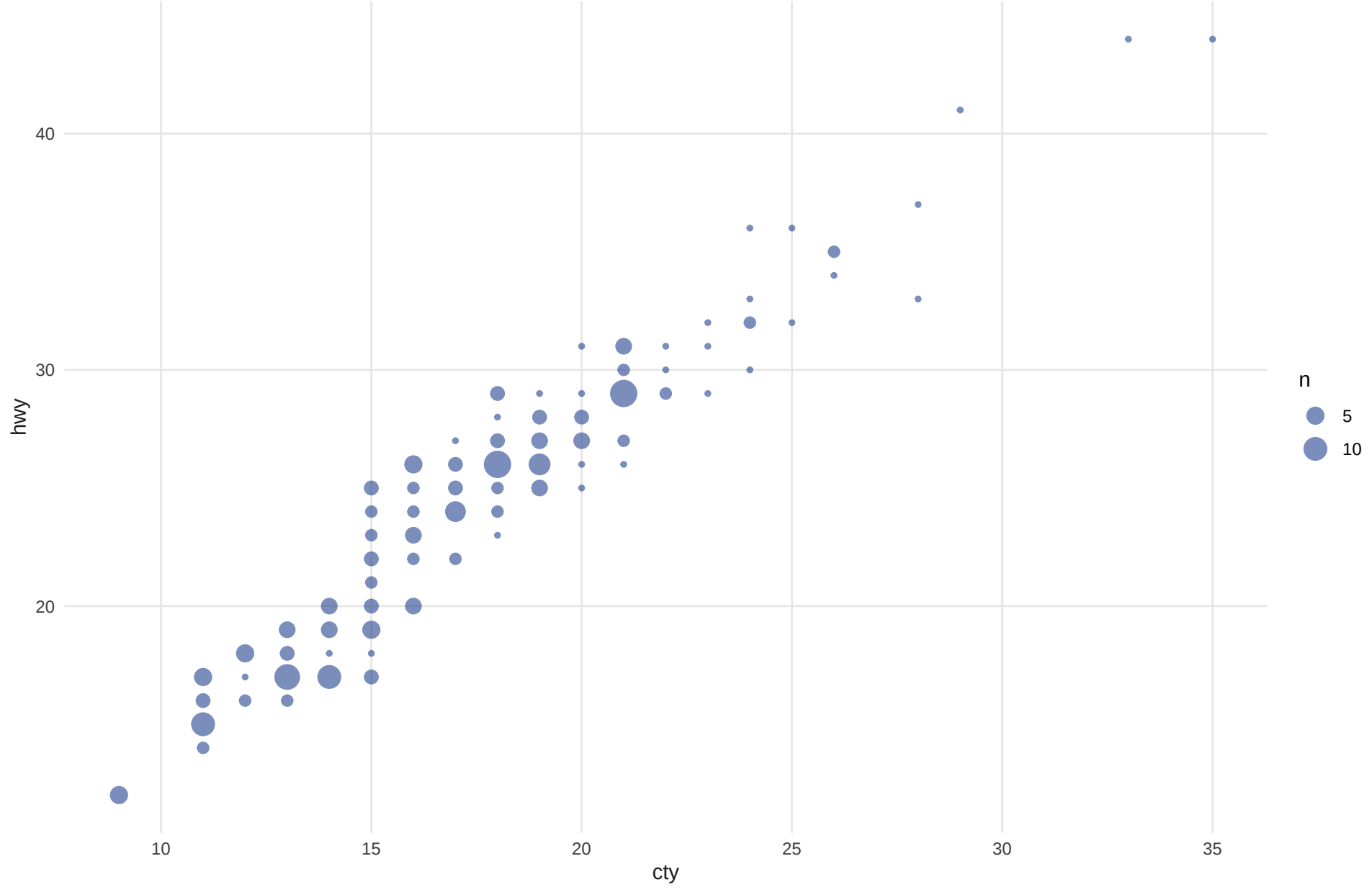

4. geom_rug − Marginal Tick Marks

Rug on bottom and left axes

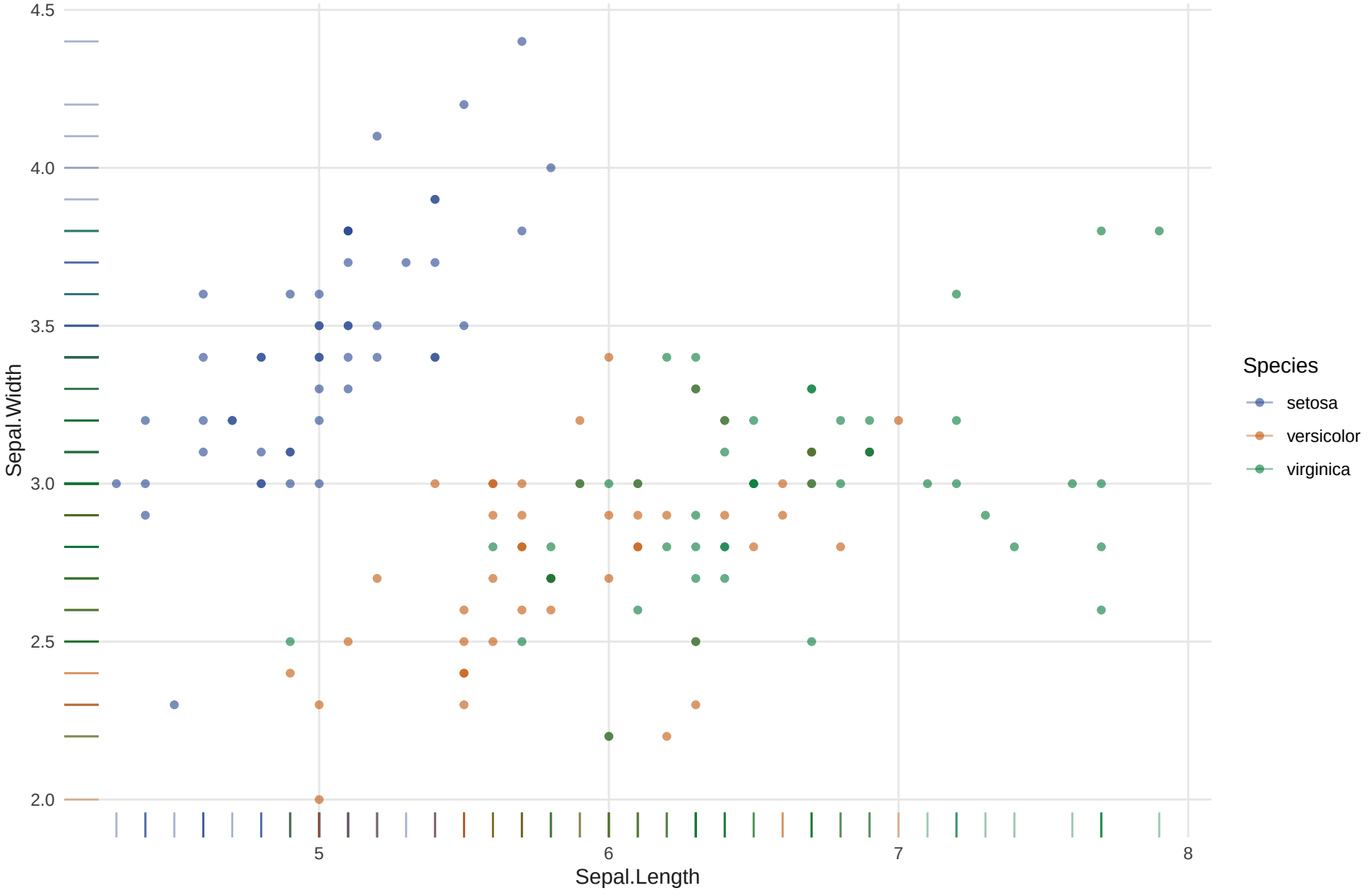

5. geom_boxplot − Box Plot with Jitter

Sepal length by species

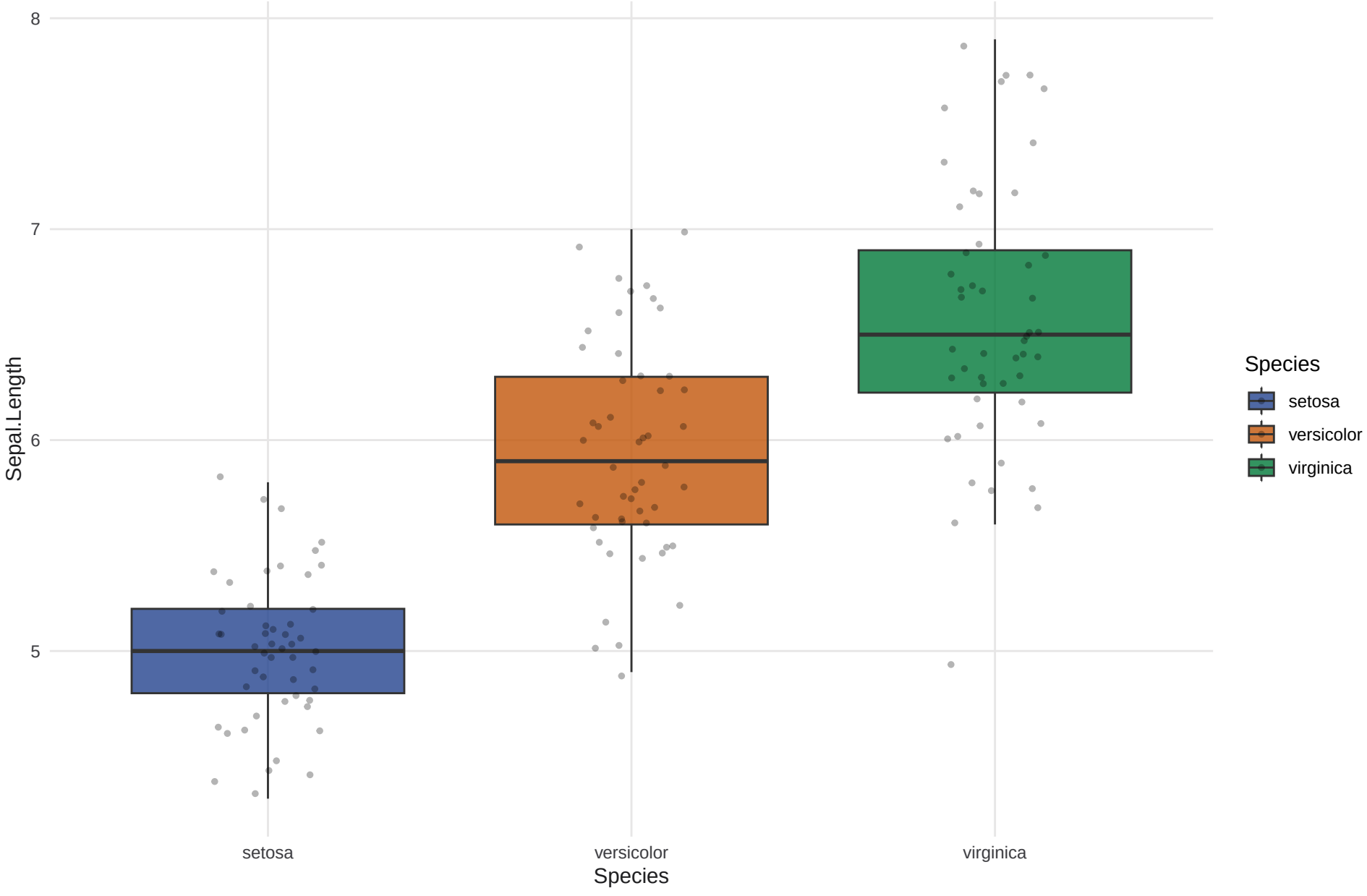

6. geom_violin – Violin Plot

Distribution shape of sepal length

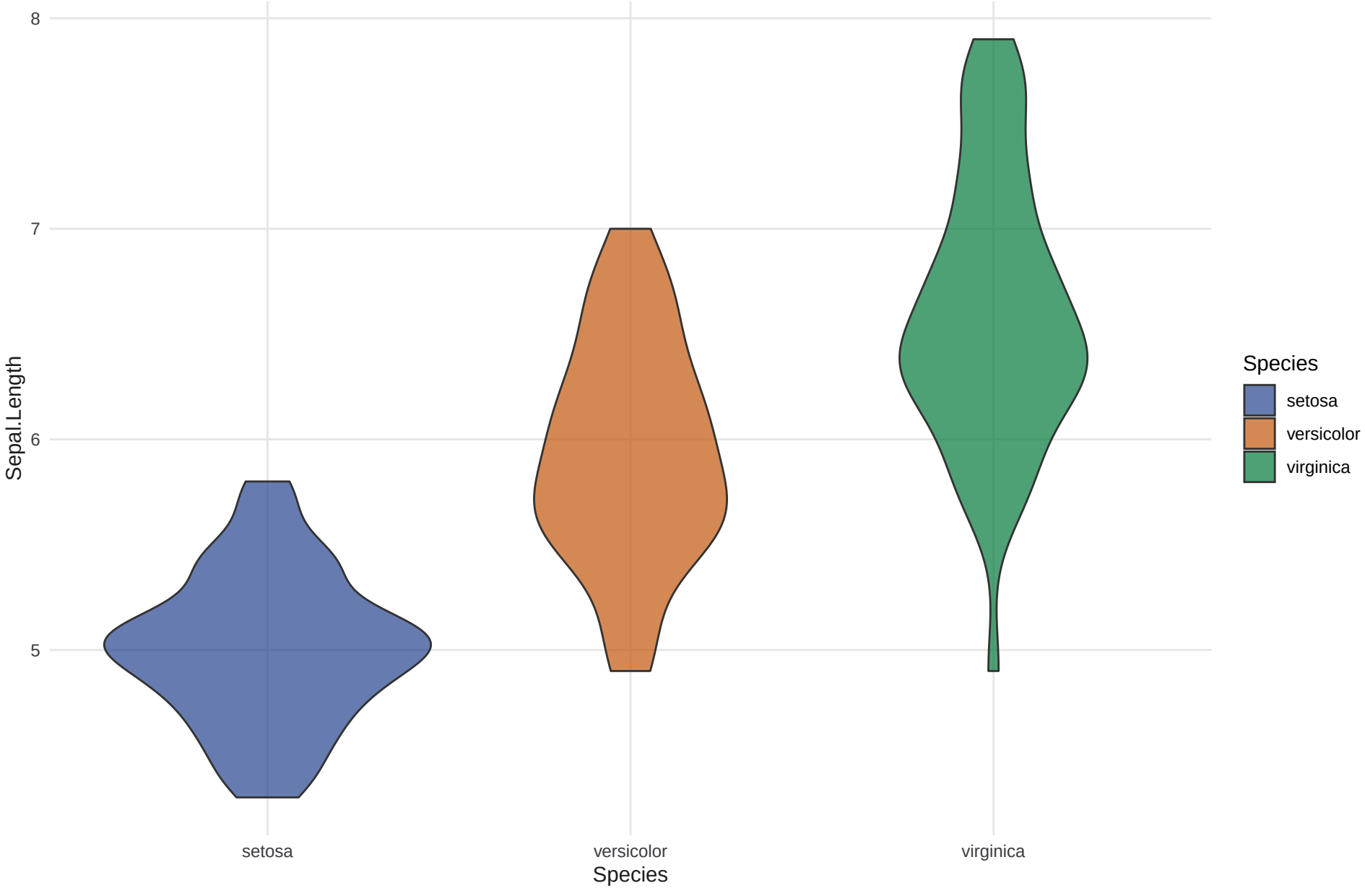

7. geom_dotplot − Dot Plot

Sepal width stacked by category

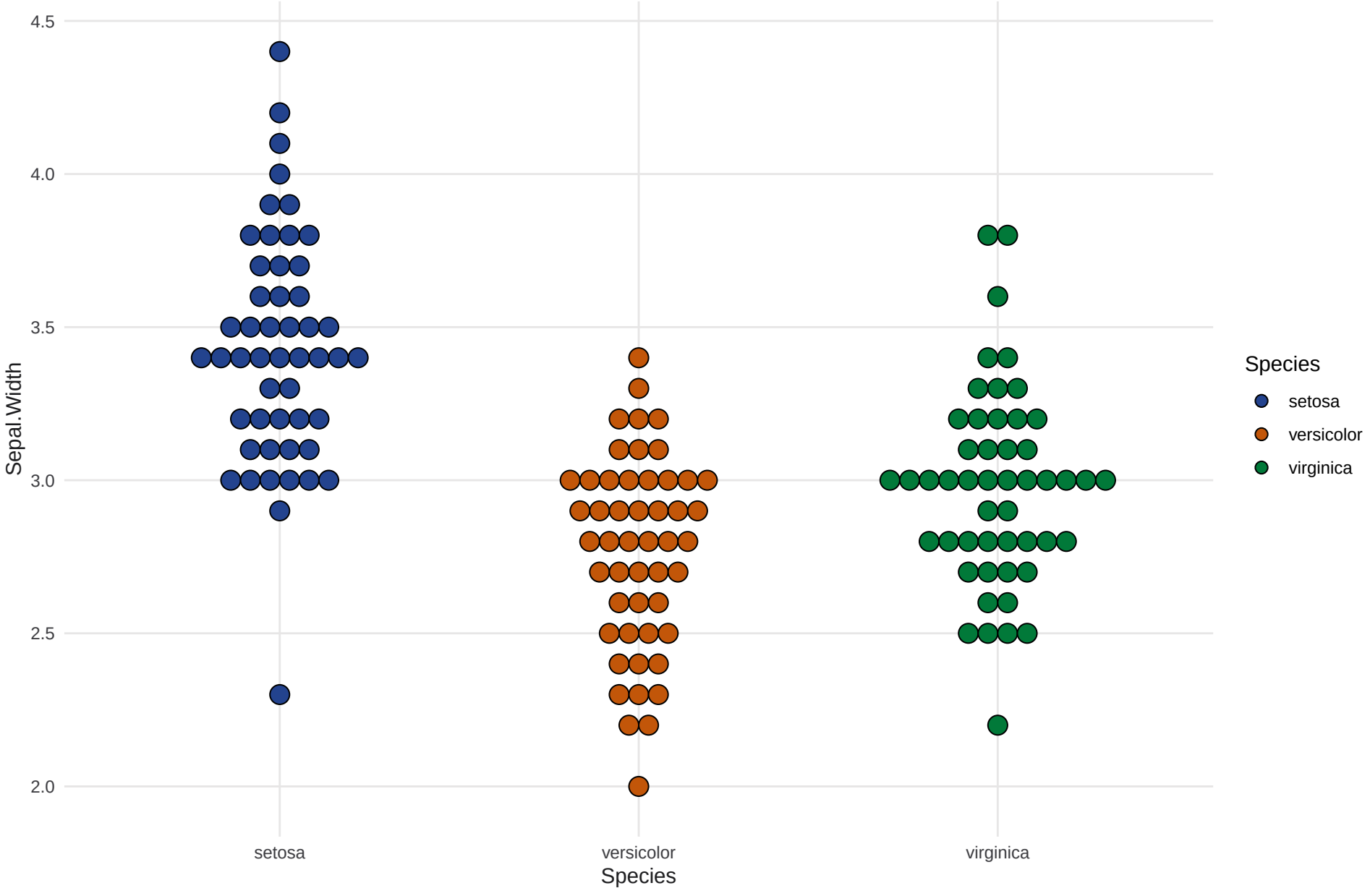

8. geom_bar – Bar Chart (auto count)

Car class frequency in mpg

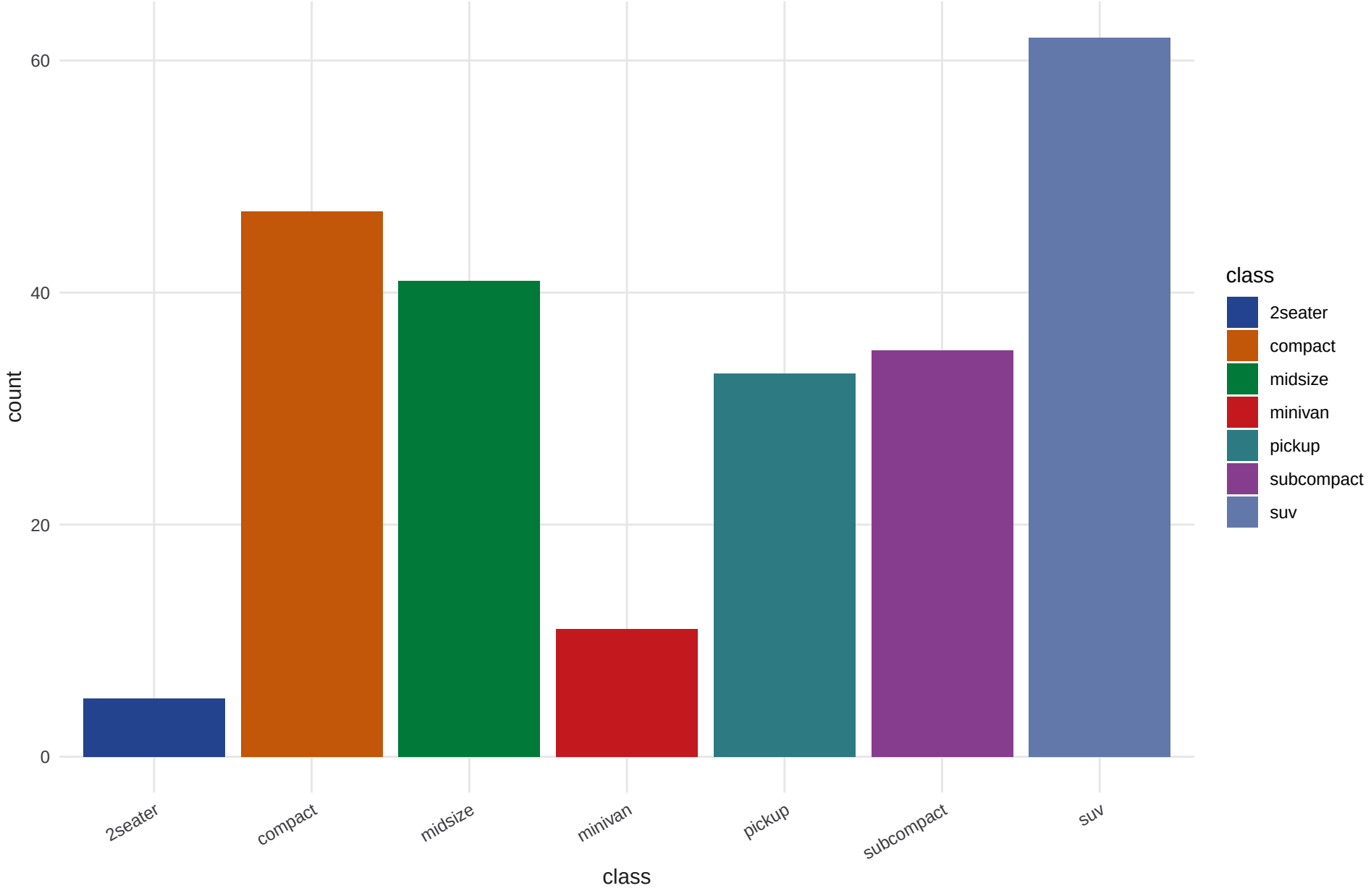

9. geom_col − Column Chart (pre−computed)

Process step yield percentages

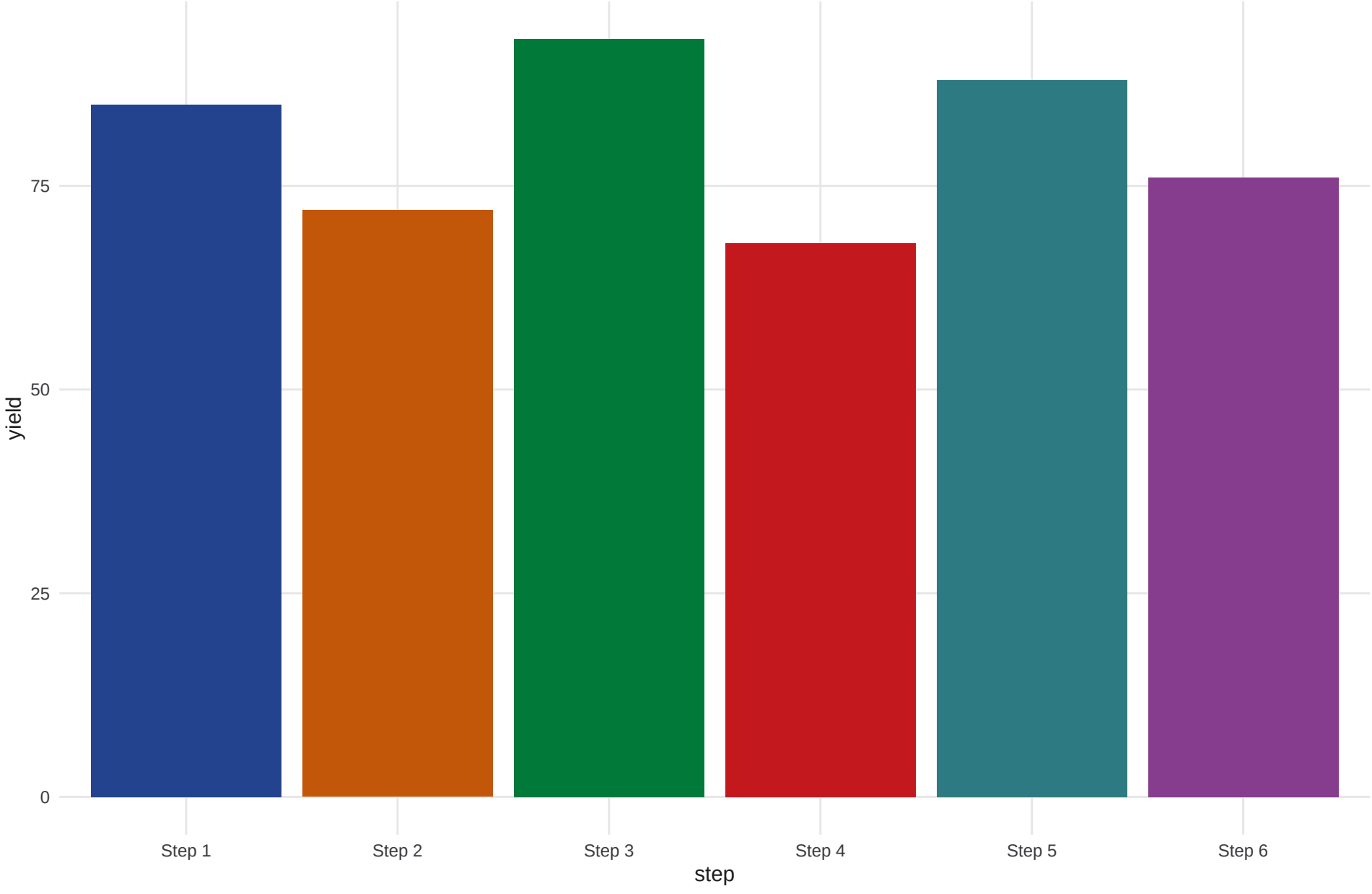

10. geom_histogram − Price Distribution

Diamond prices (53K observations)

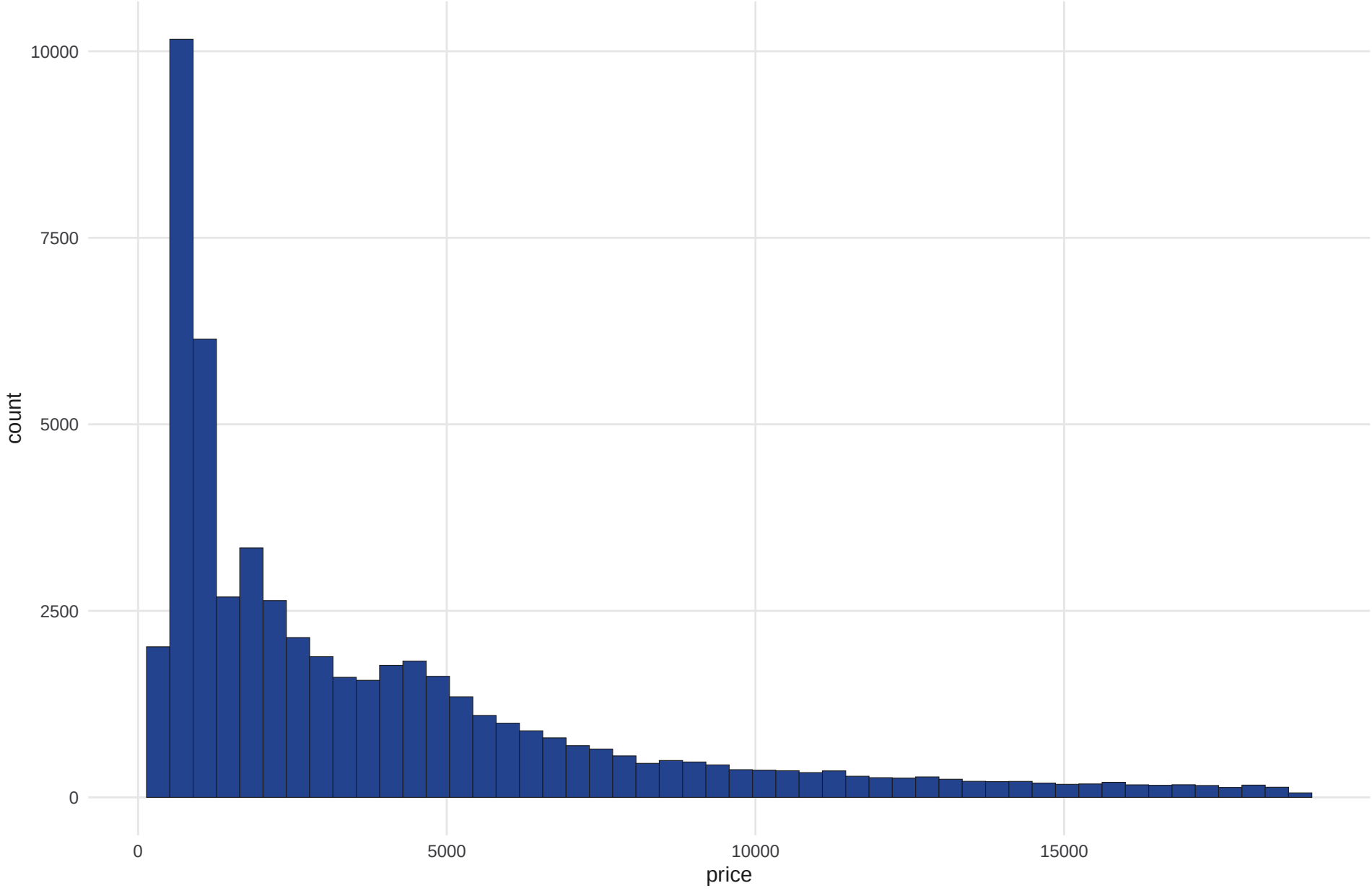

11. geom_freqpoly − Frequency Polygon

Diamond price by cut quality

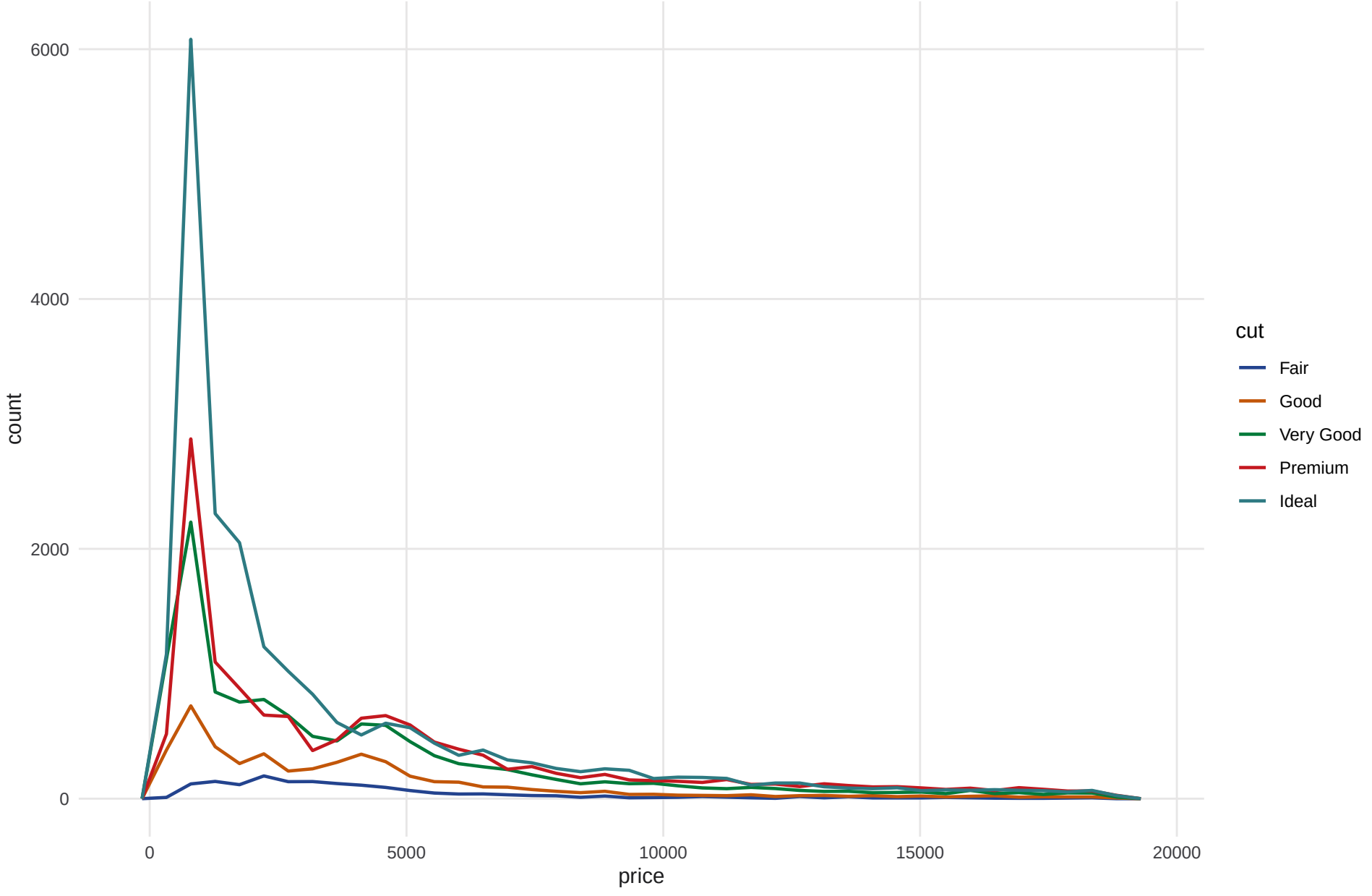

12. geom_density − Density Distribution

Petal width by species

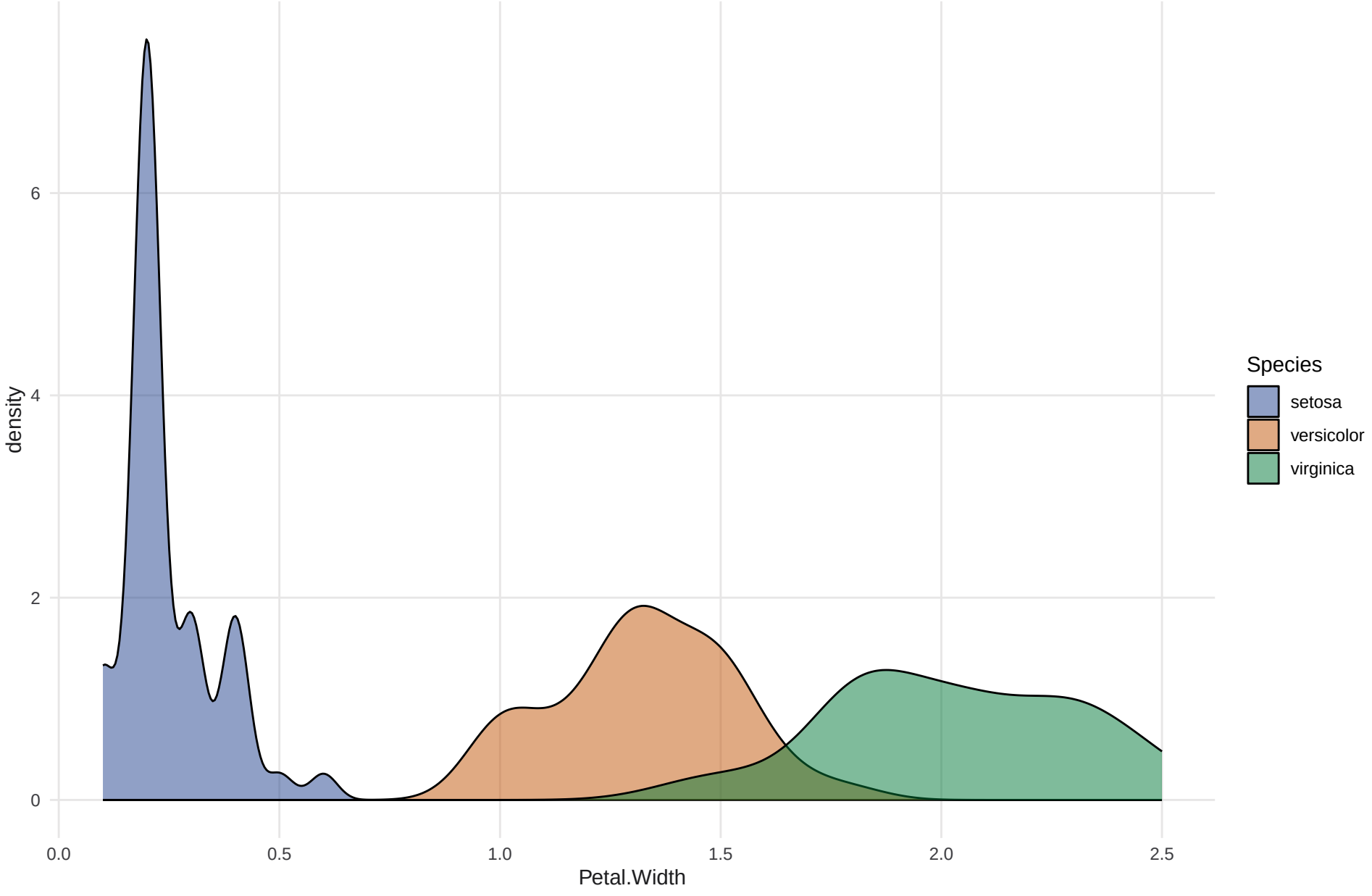

13. geom_line − Multi−Series Time Series

Six sensor readings

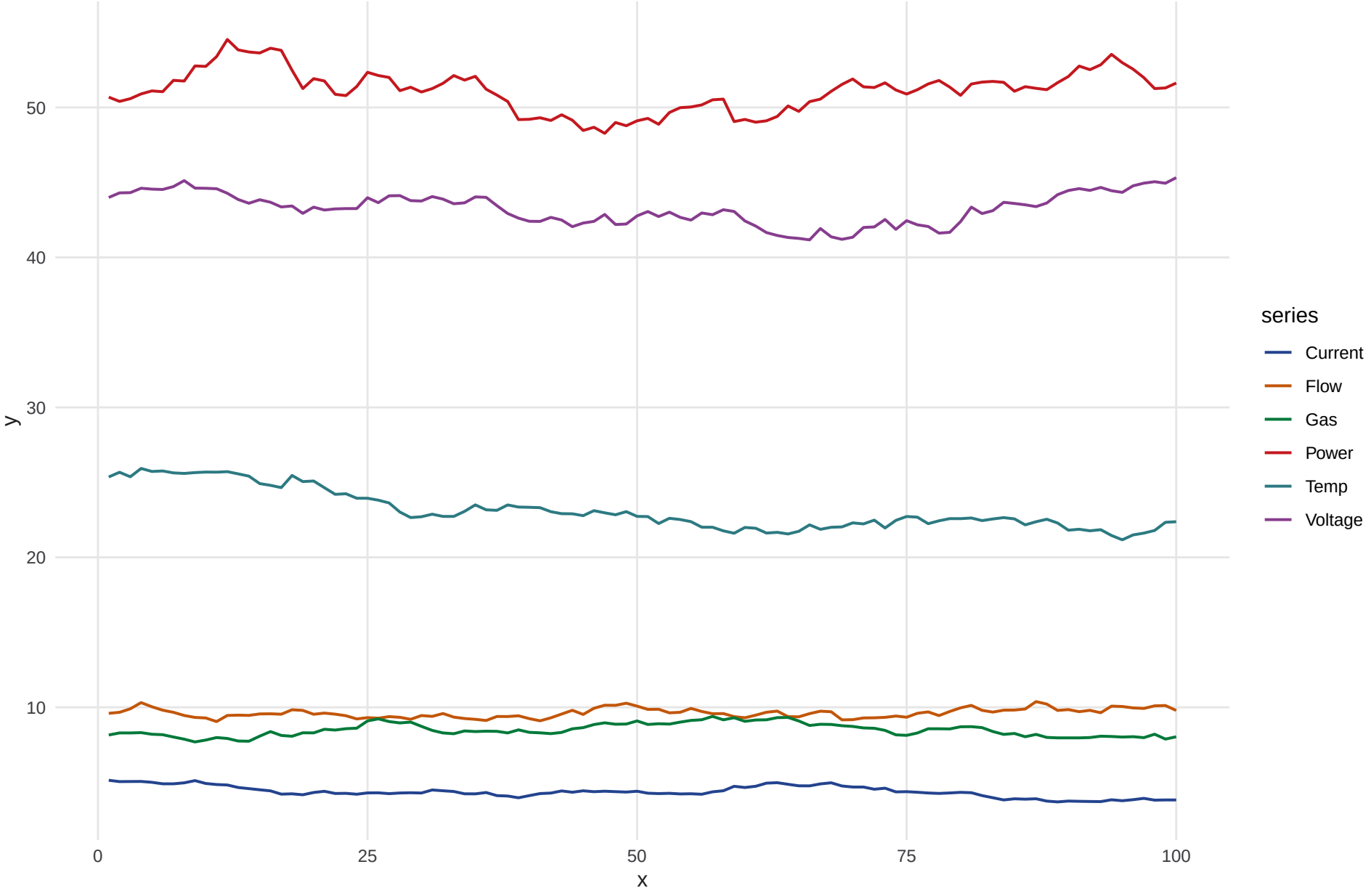

14. geom_step − Step Function

Horizontal−then−vertical connections

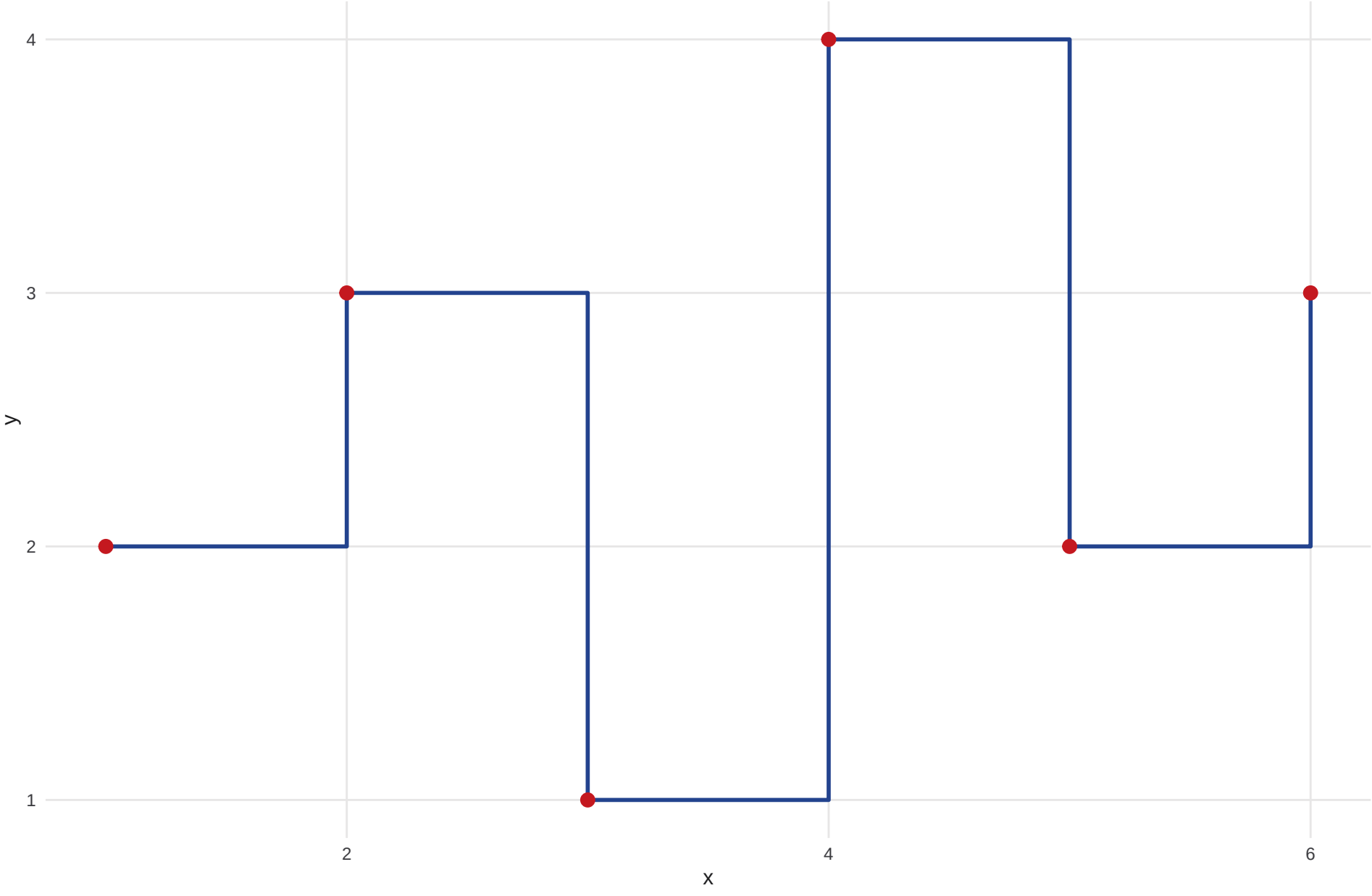

15. geom_path − Path in Data Order

Points connected in row order, not sorted by x

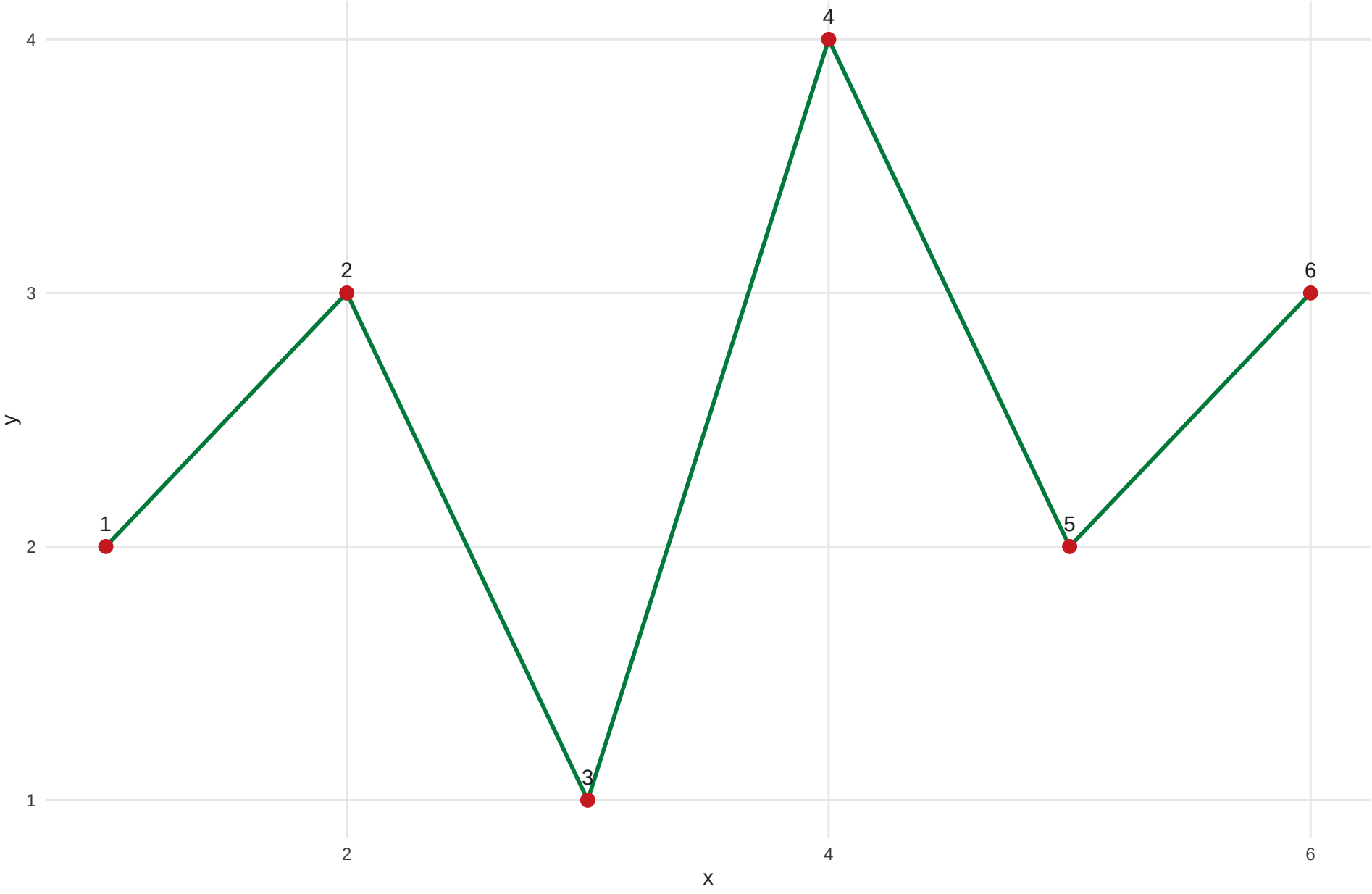

16. geom_area − Filled Area

Cumulative values with shaded region

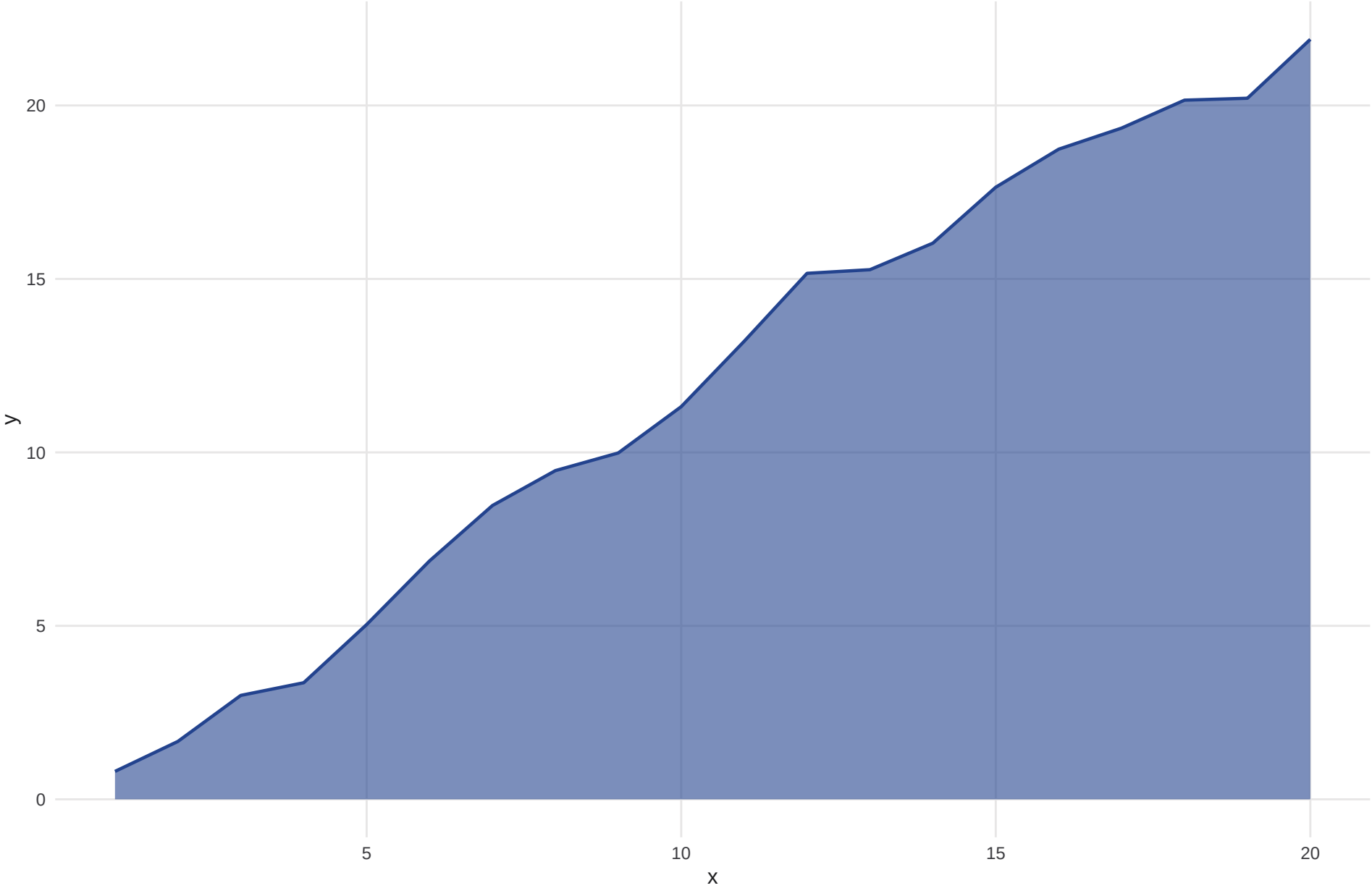

17. geom_area – Stacked Area Chart

Five groups stacked over time

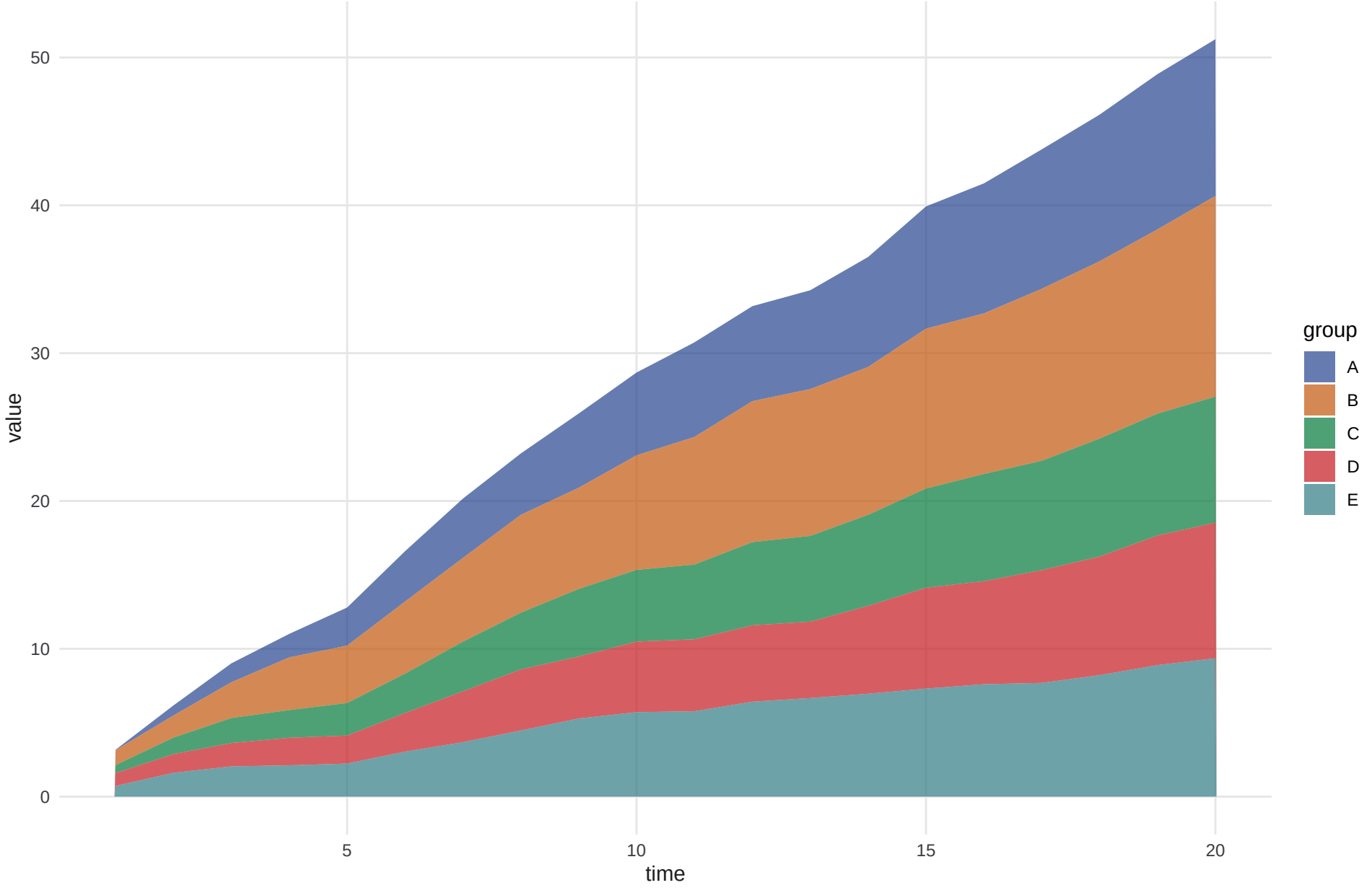

18. geom_hline − Horizontal Reference Line

Dashed line at mean highway mileage

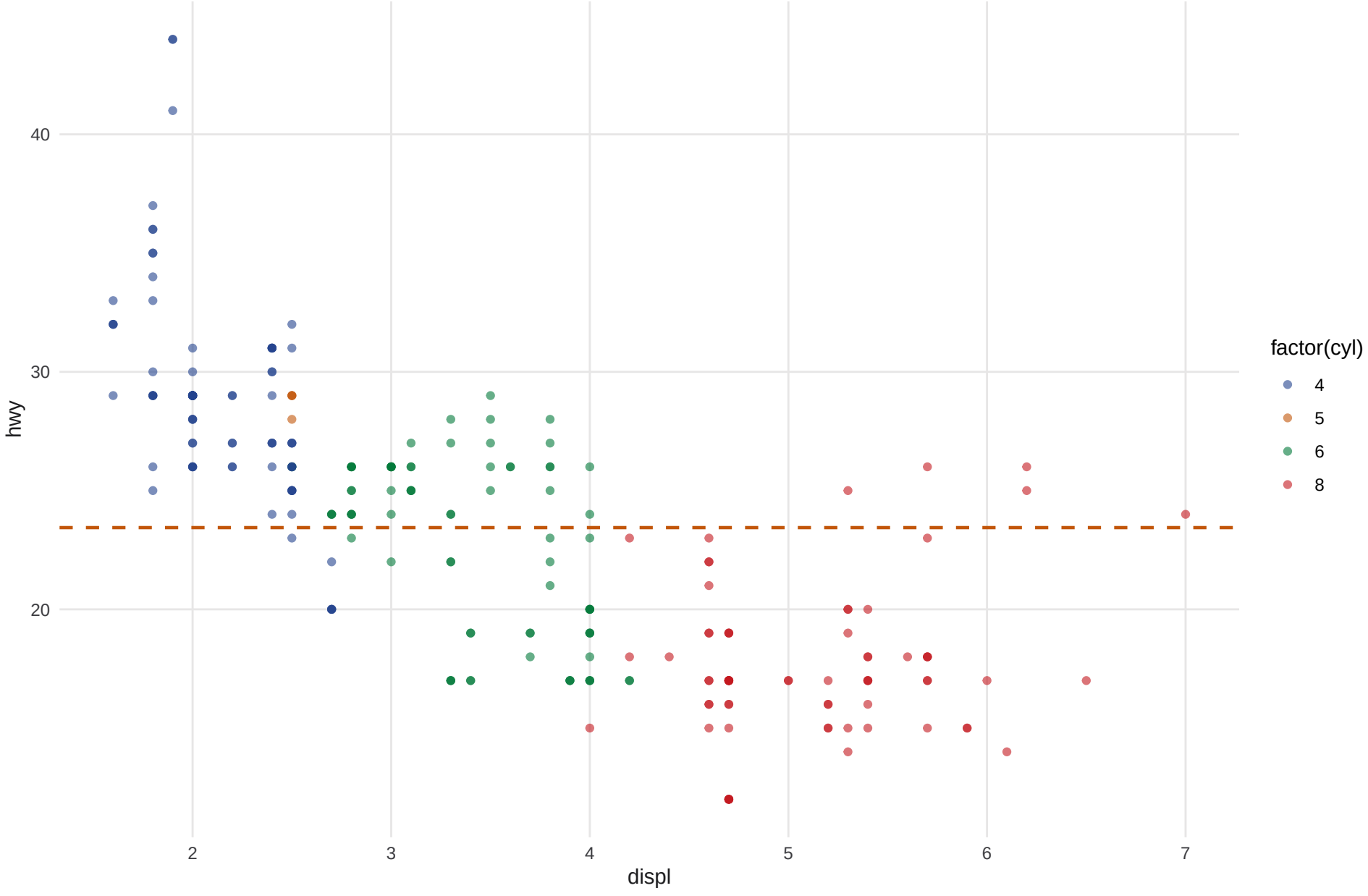

19. geom_vline − Vertical Reference Lines

6−cylinder region between 2.6−3.5 displacement

20. geom_abline − Linear Model Fit

Slope = −3.53, Intercept = 35.7

21. geom_segment – Directed Segments

Arrows from (x,y) to (xend,yend)

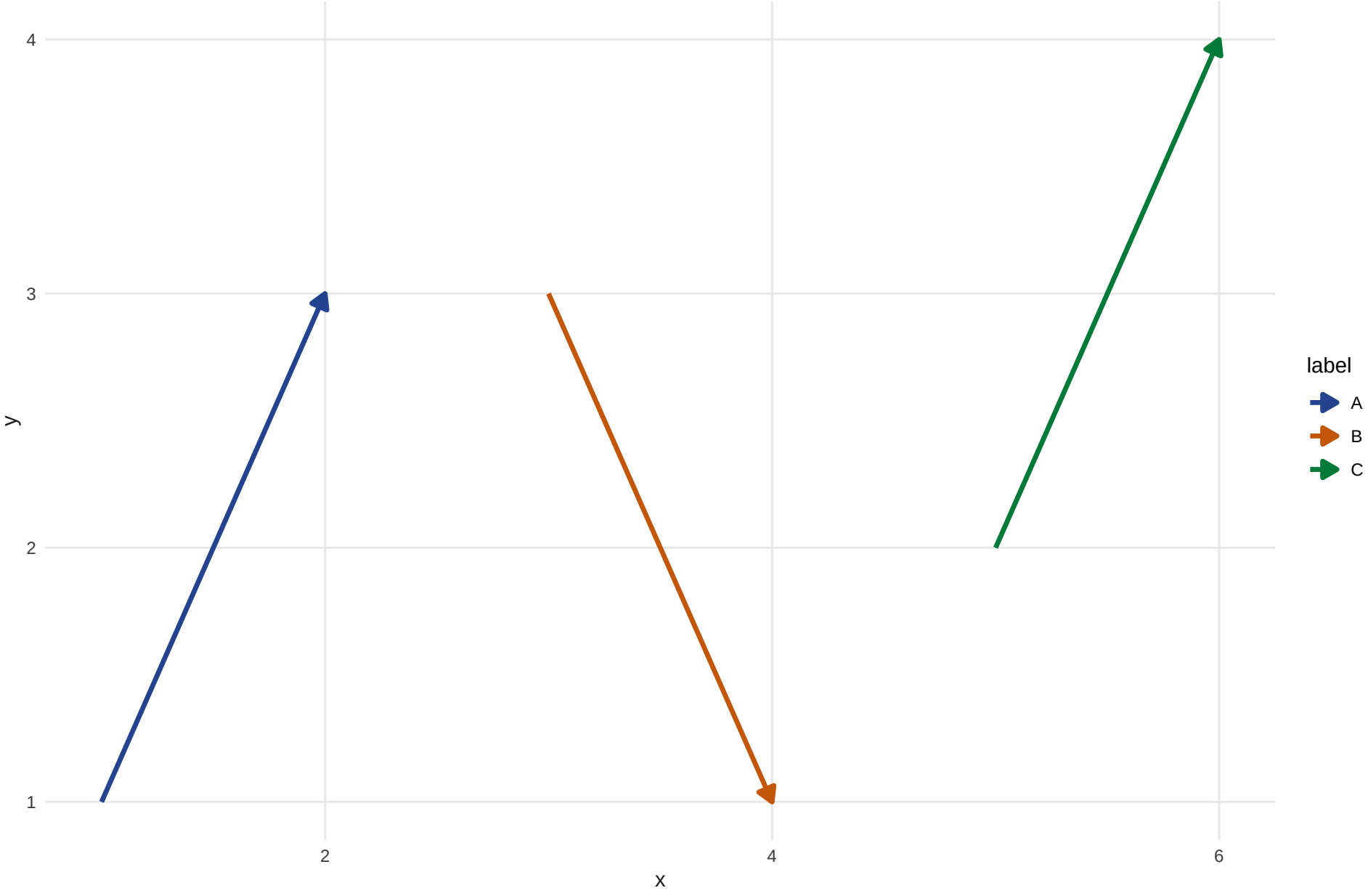

22. geom_curve − Curved Connectors

Positive and negative curvature with arrows

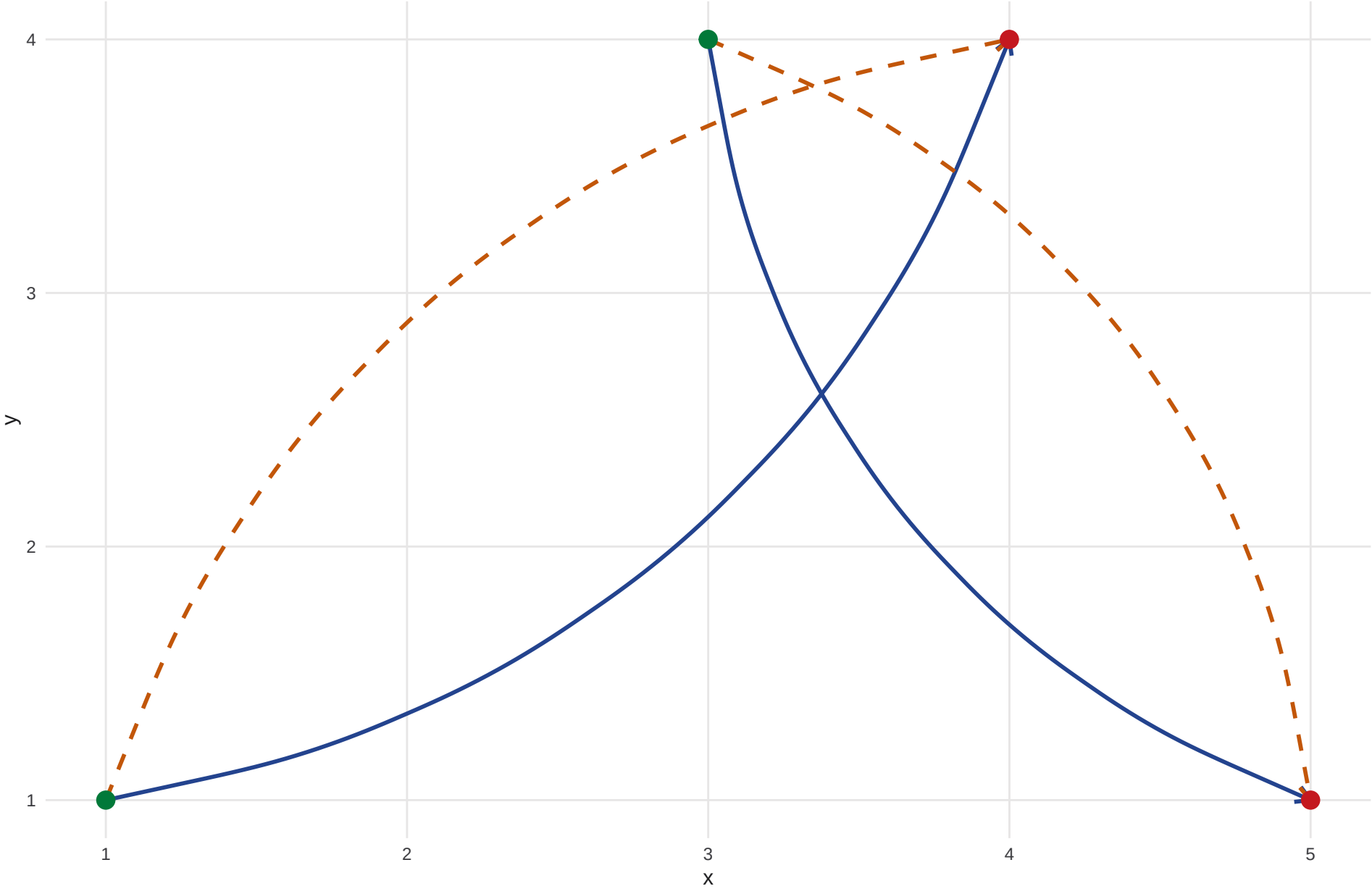

23. geom_spoke − Directional Spokes

Lines at given angle and radius from each point

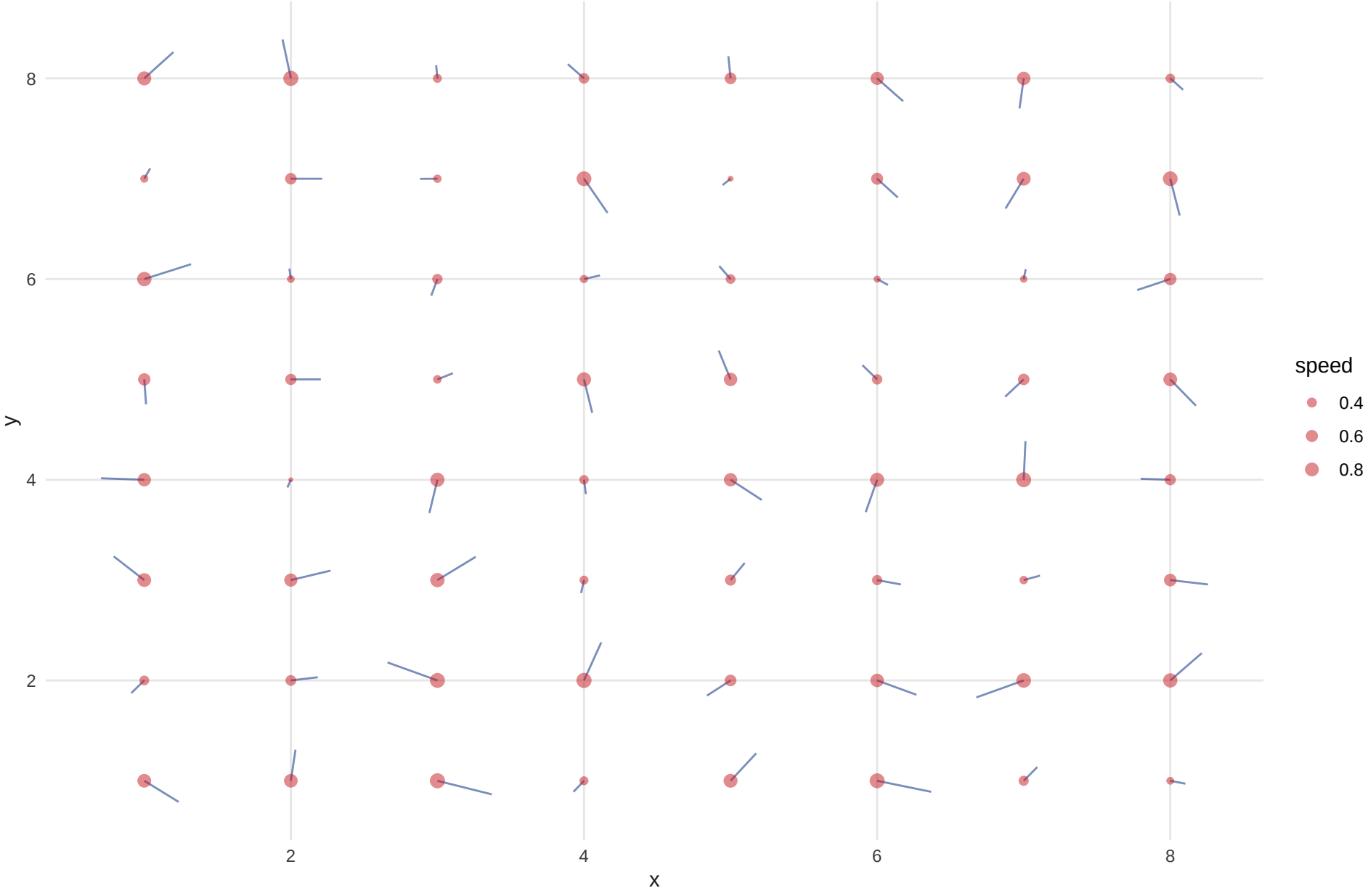

24. geom_rect − Rectangles

Defined by xmin/xmax/ymin/ymax

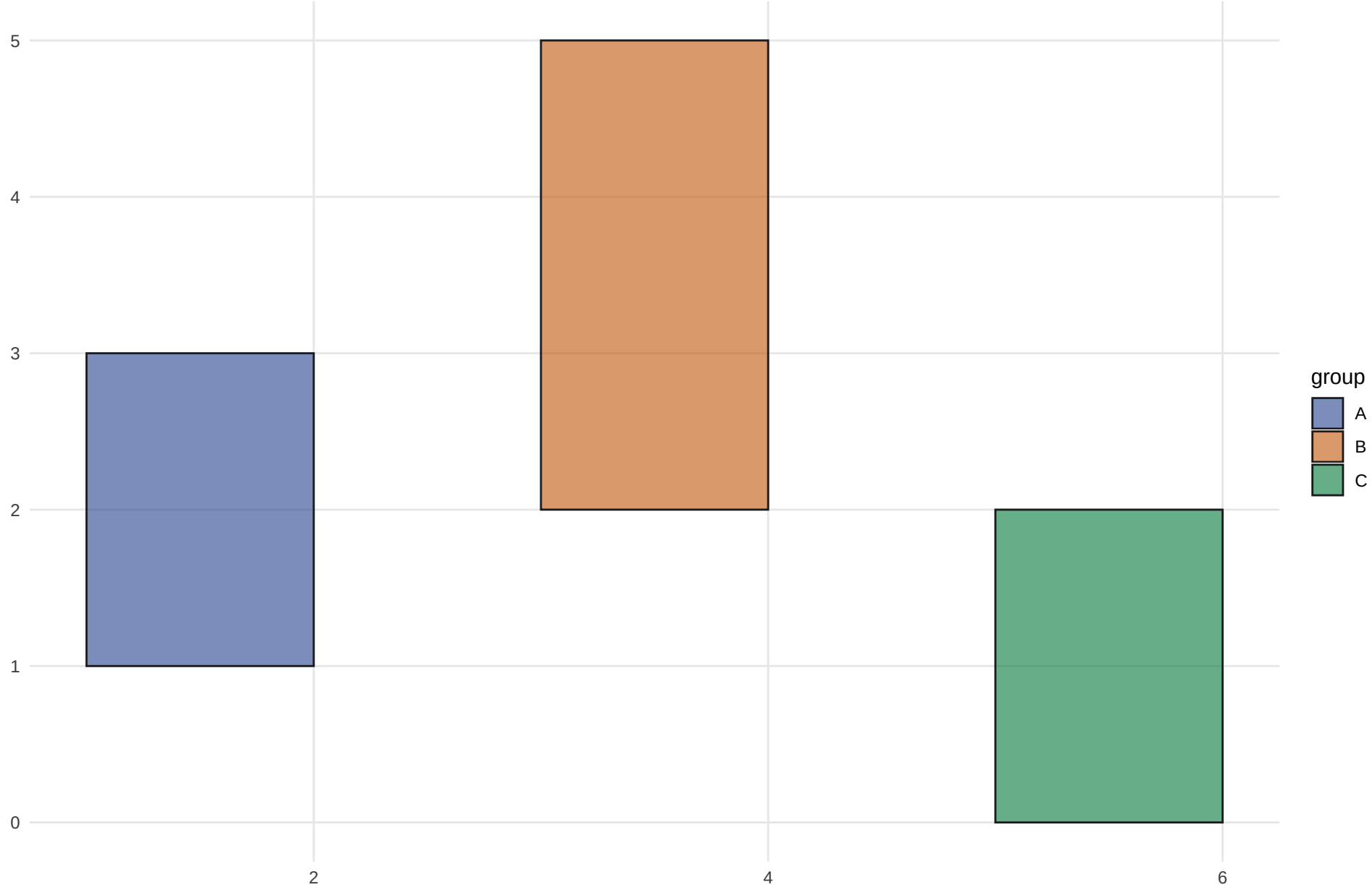

25. geom_tile – Tile Heatmap

5x5 grid with random values

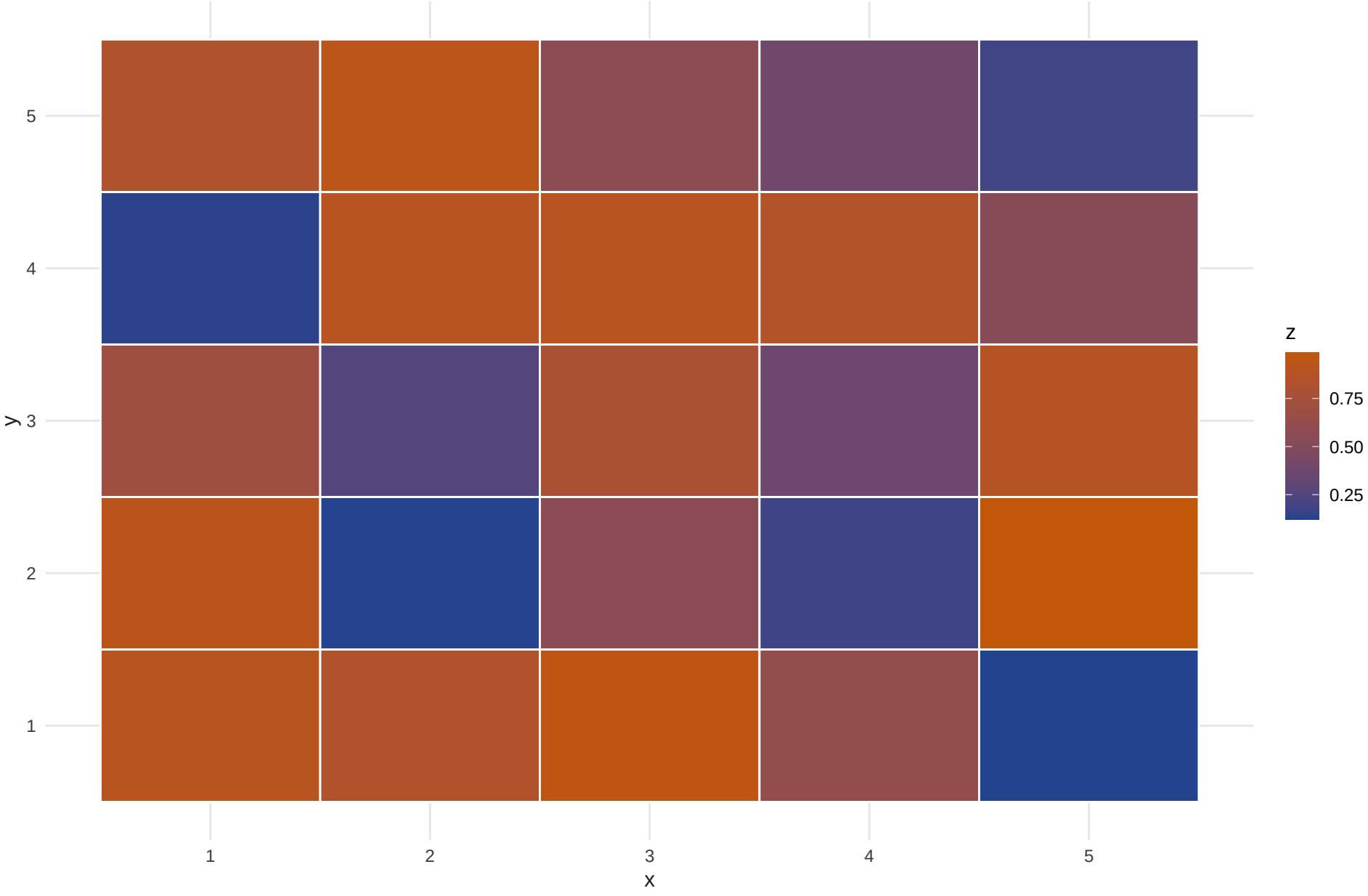

26. geom_polygon – Filled Polygon

Vertices connected in data order, enclosed area filled

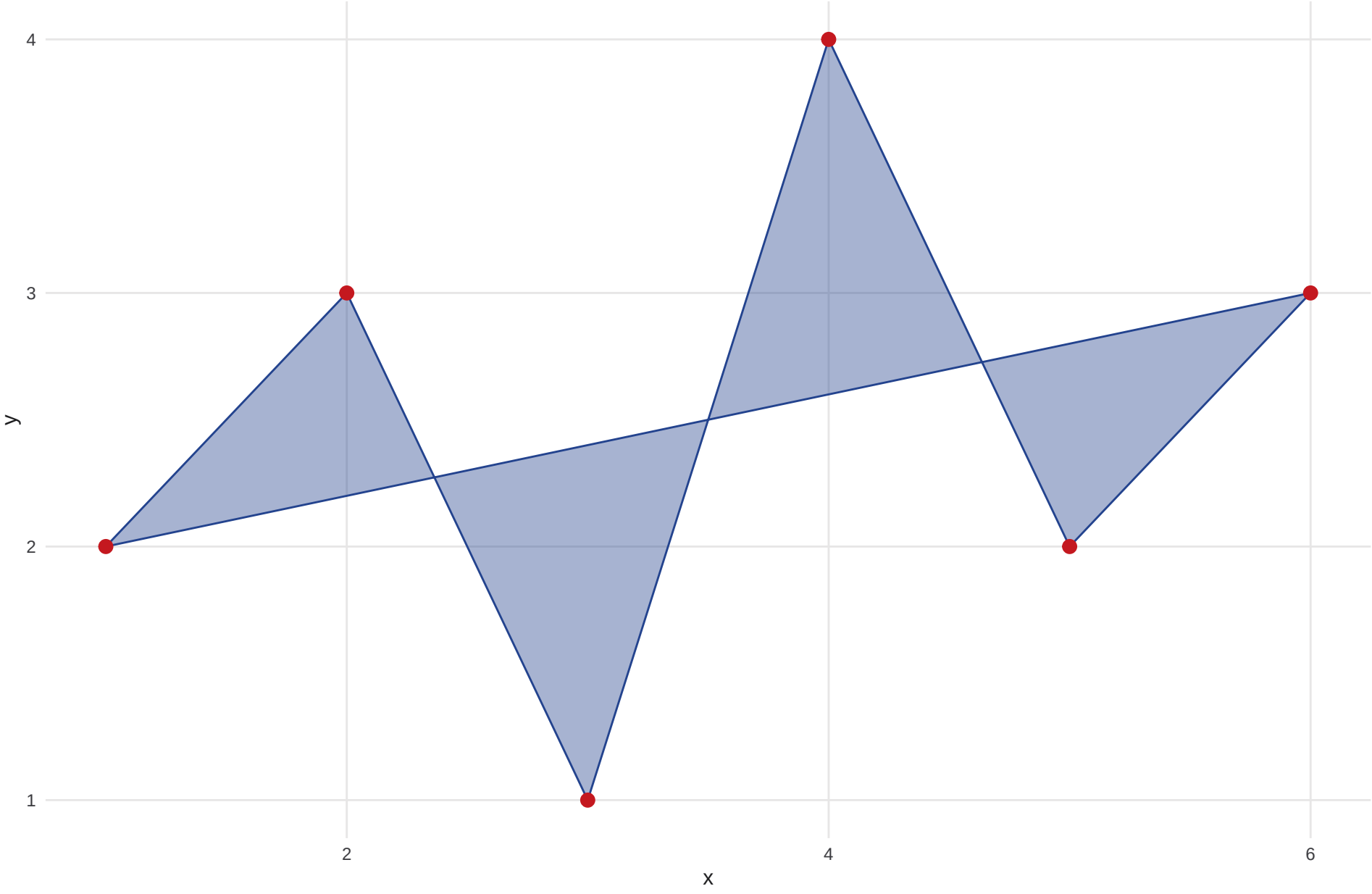

27. geom_text − Text Labels

Car model names at data points

28. geom_label – Boxed Labels

Text inside padded, filled boxes

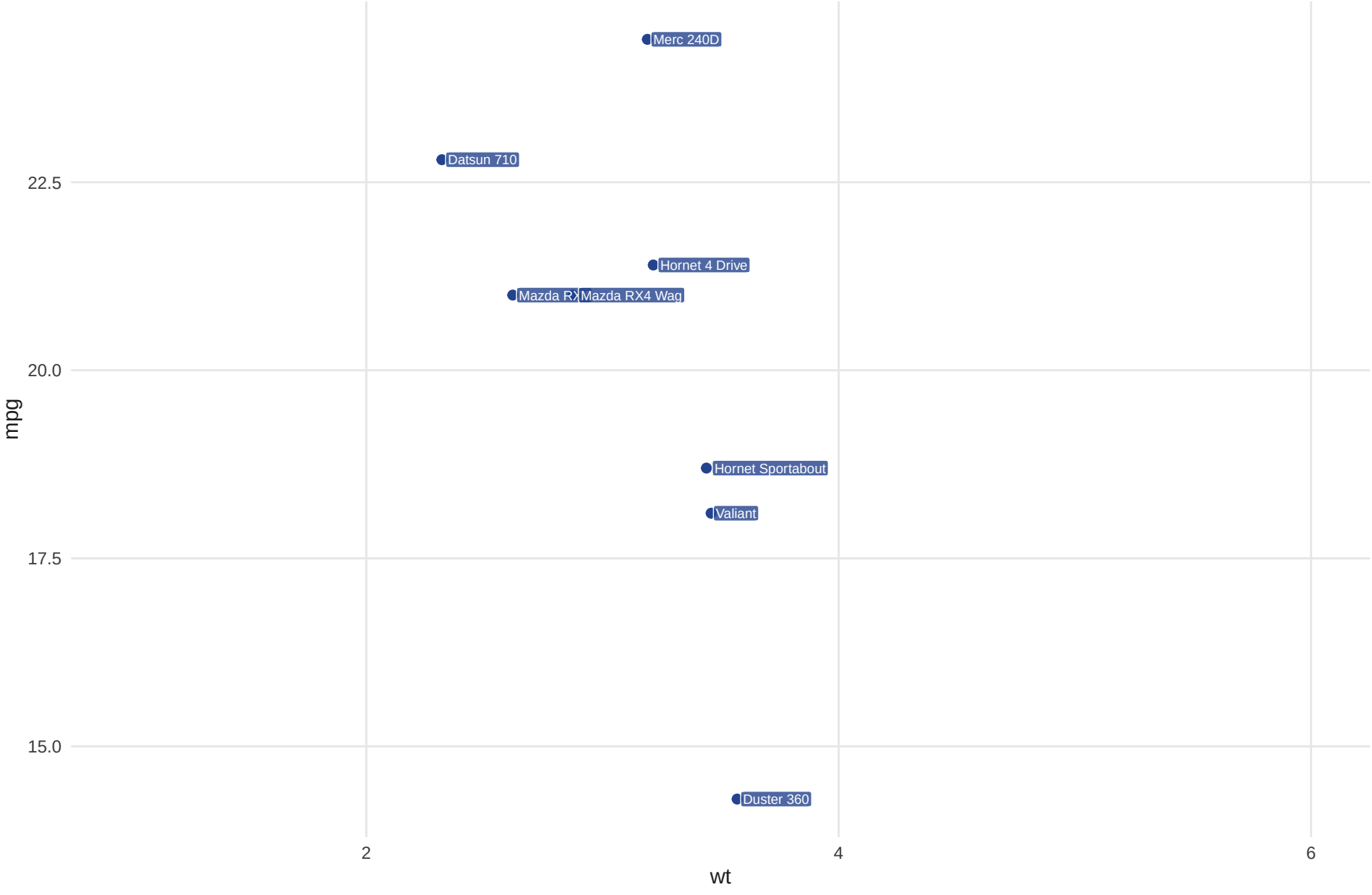

29. geom_smooth − LOESS Smooth

Default smoother with standard error band

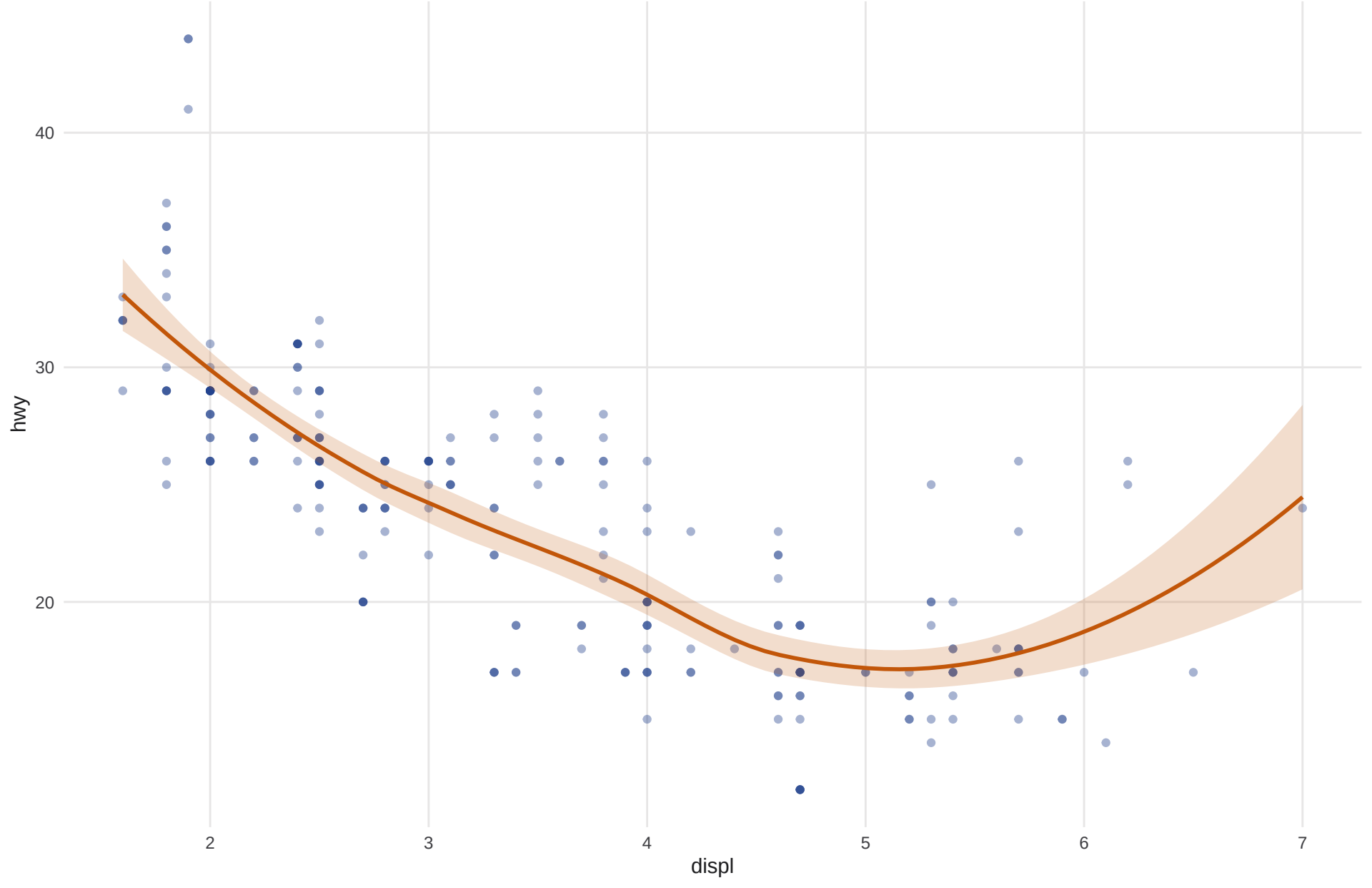

30. geom_smooth − Linear Model by Group

Separate lm fit per cylinder count

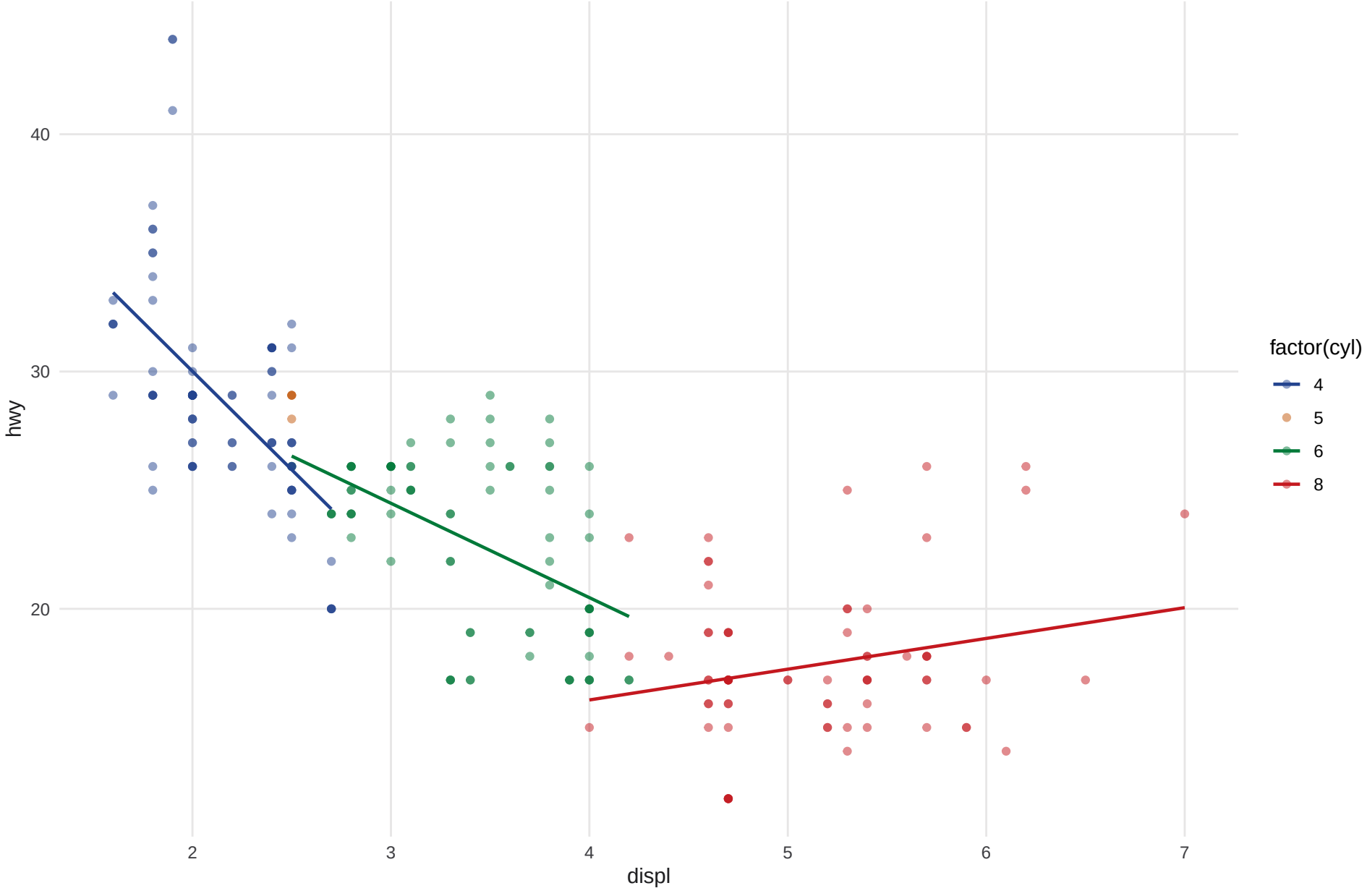

31. geom_quantile − Quantile Regression

25th, 50th, 75th percentile lines

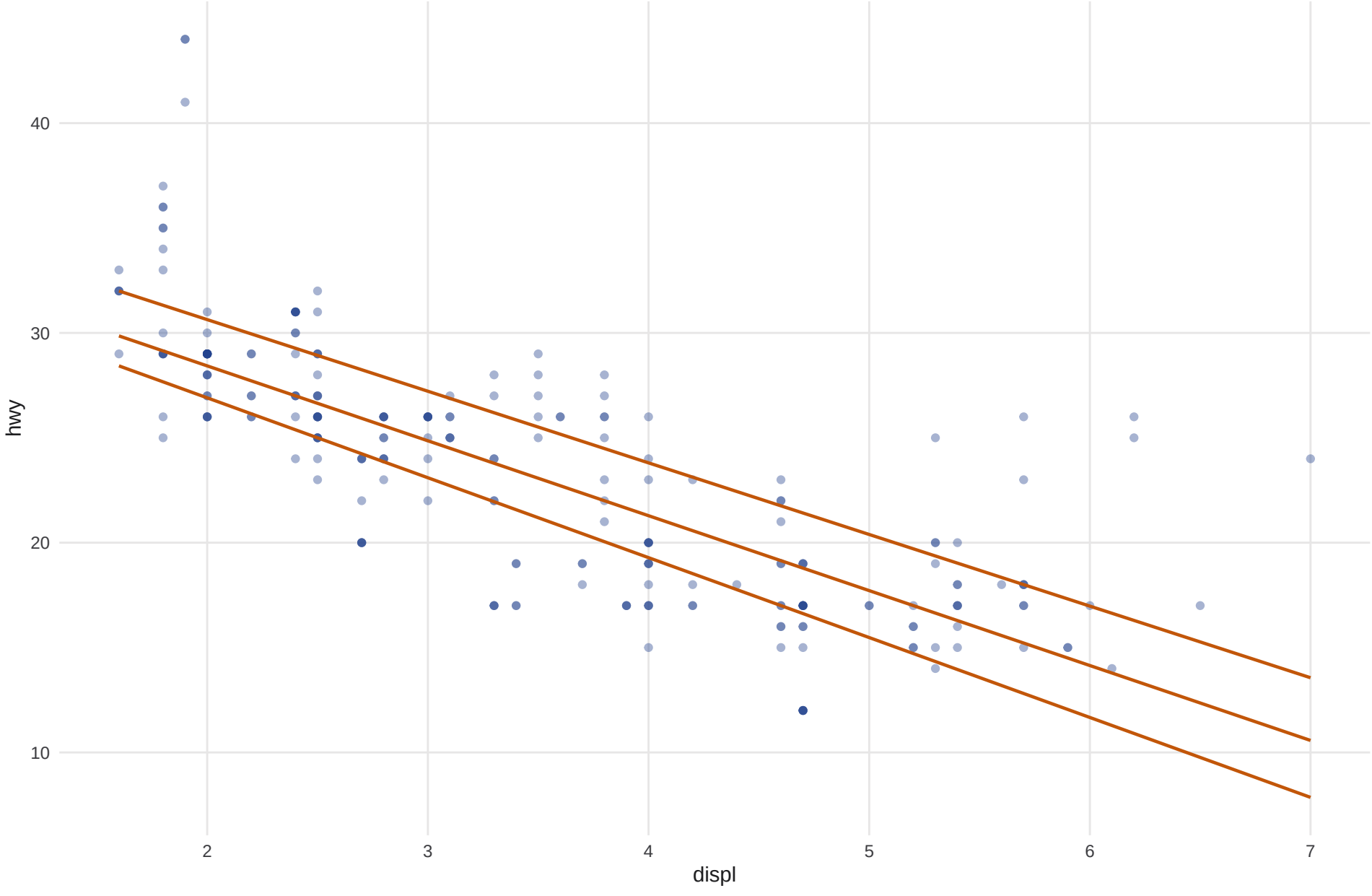

32. geom_linerange − Vertical Line Range

Lower to upper boundaries

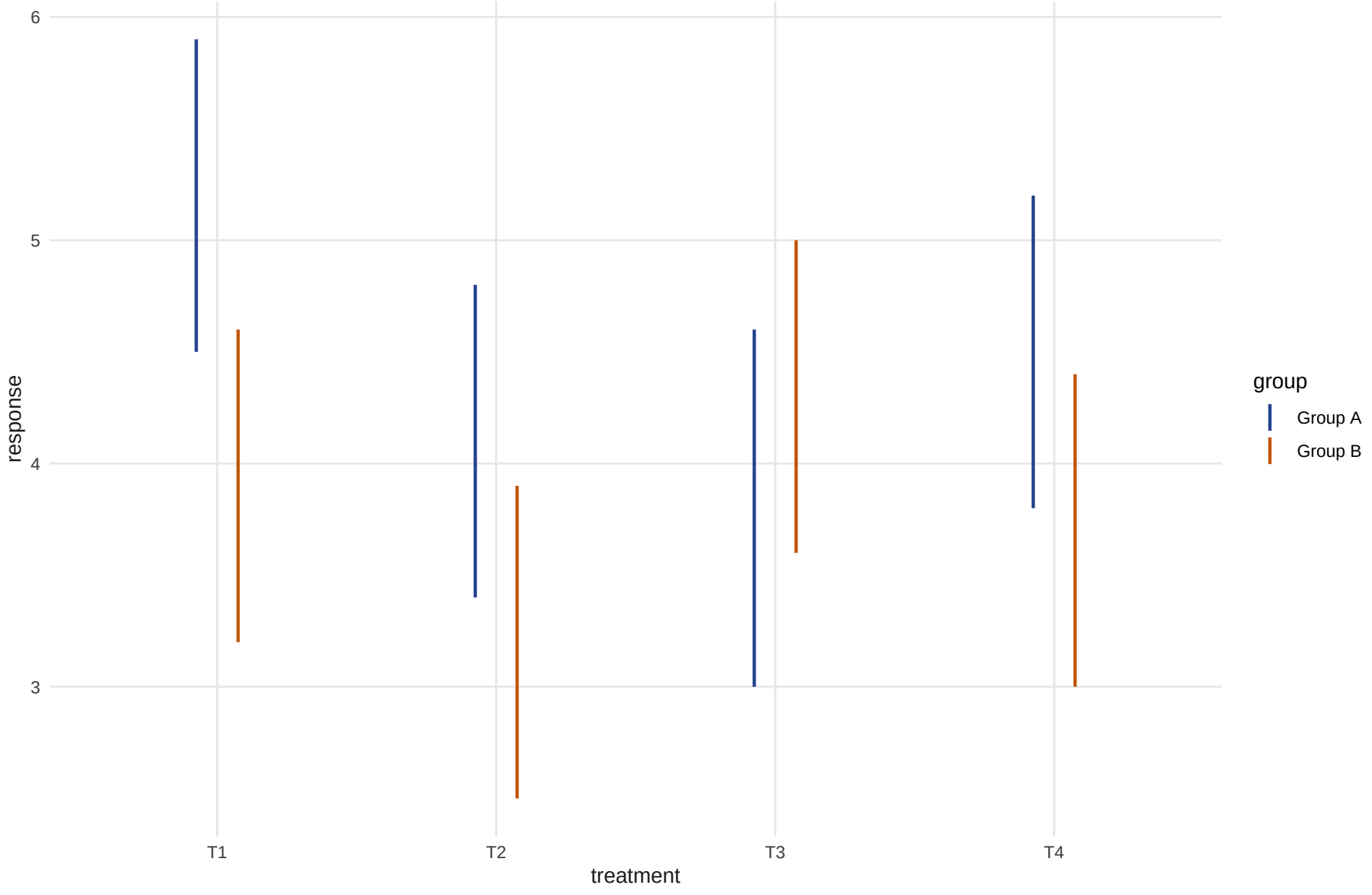

33. geom_pointrange − Point + Range

Point at response with range to bounds

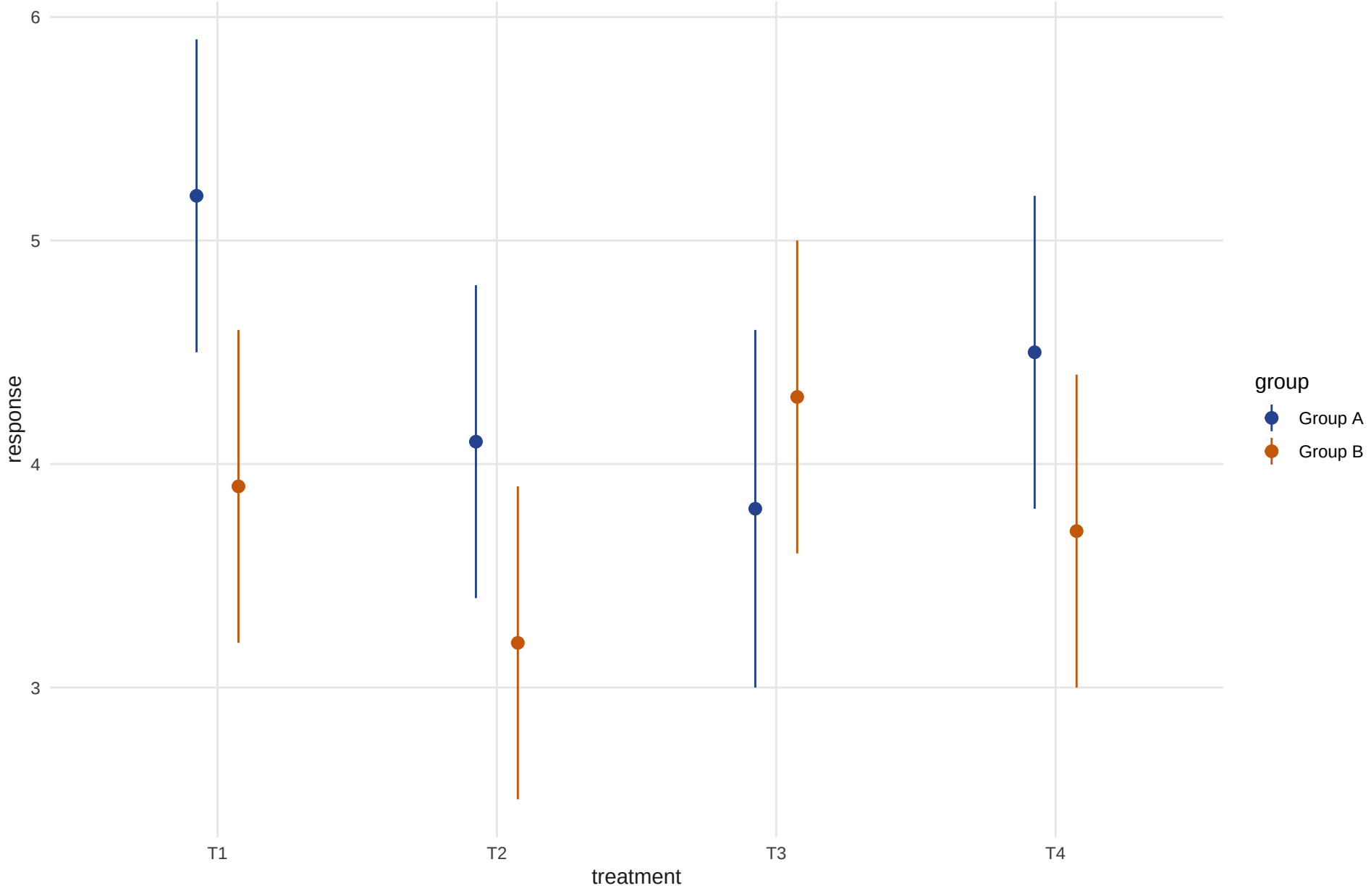

34. geom_crossbar − Cross Bar

Horizontal bar at value with box to bounds

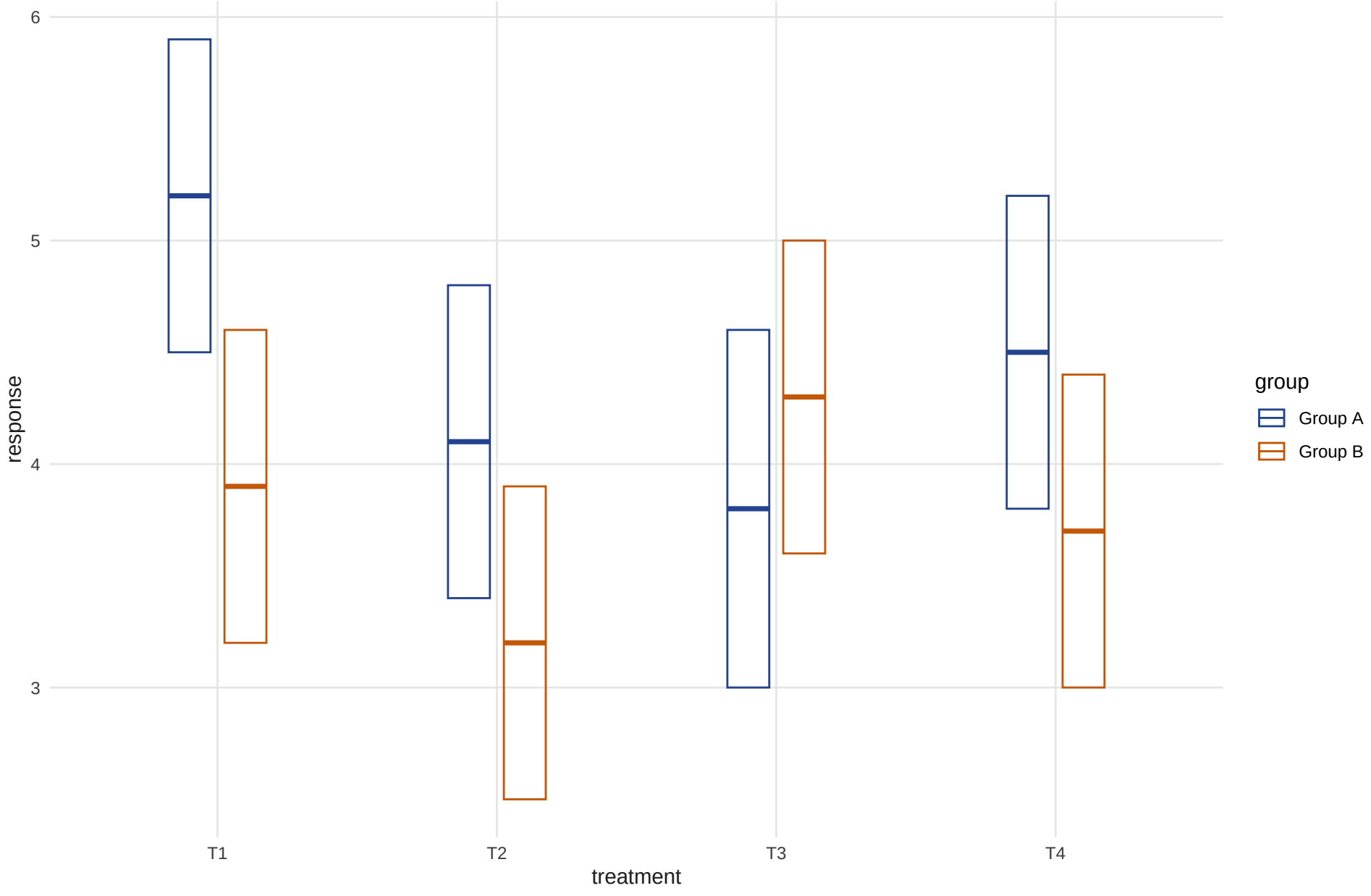

35. geom_errorbar − Error Bars

Capped vertical error bars with points

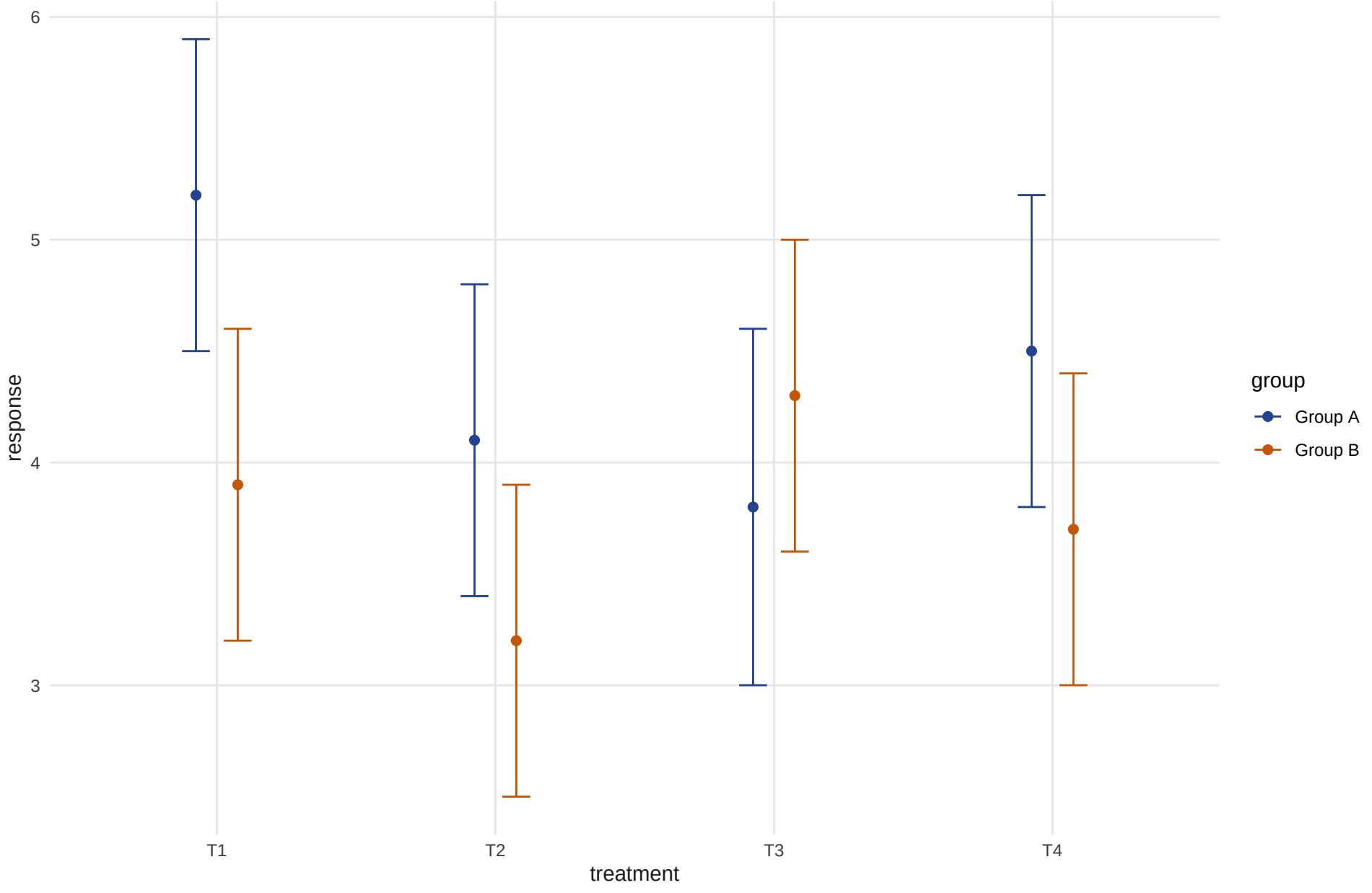

36. geom_errorbarh − Horizontal Error Bars

Error bars along x−axis

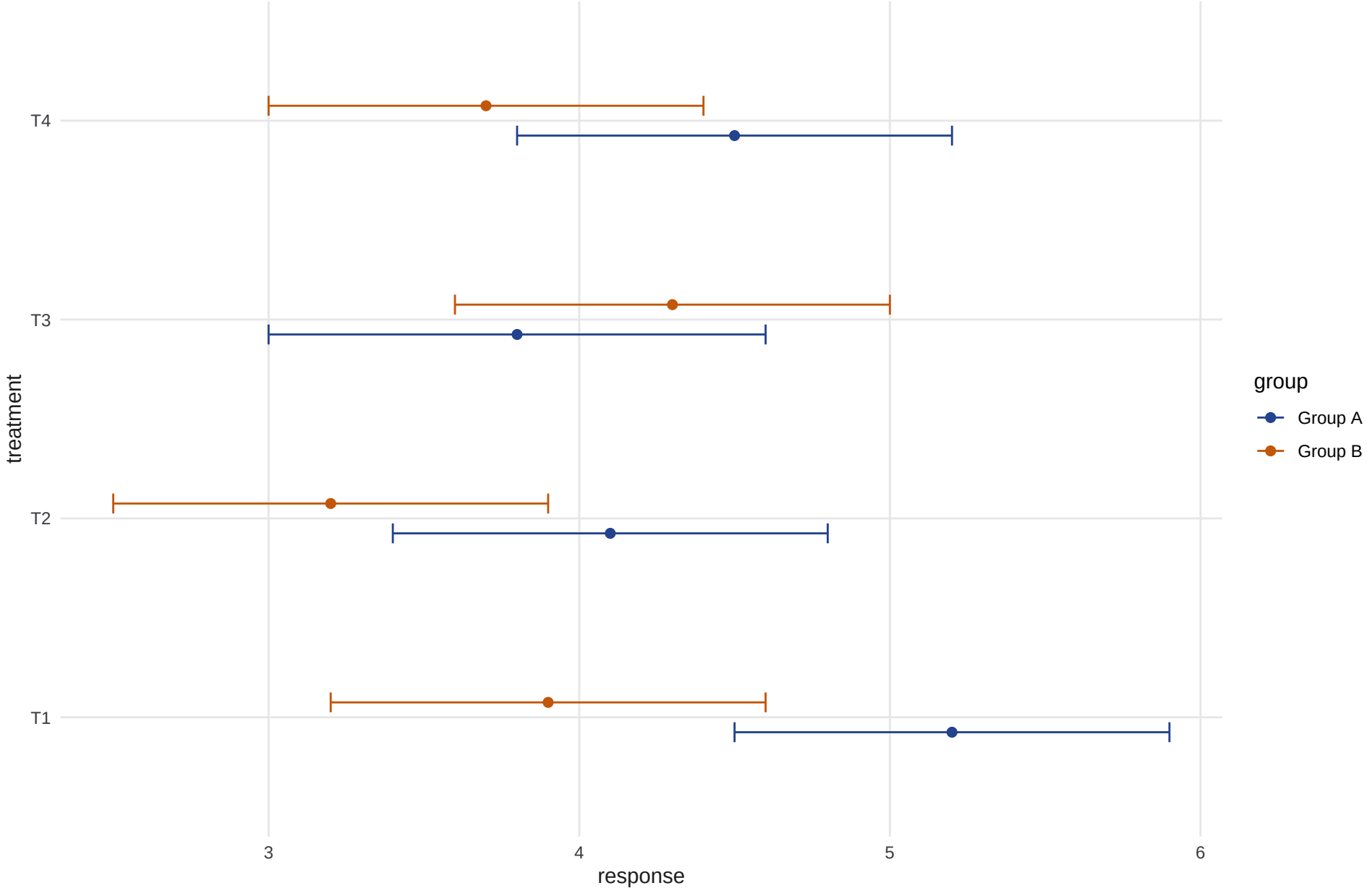

37. geom_ribbon − Confidence Band

Lake Huron water level ± 1 ft

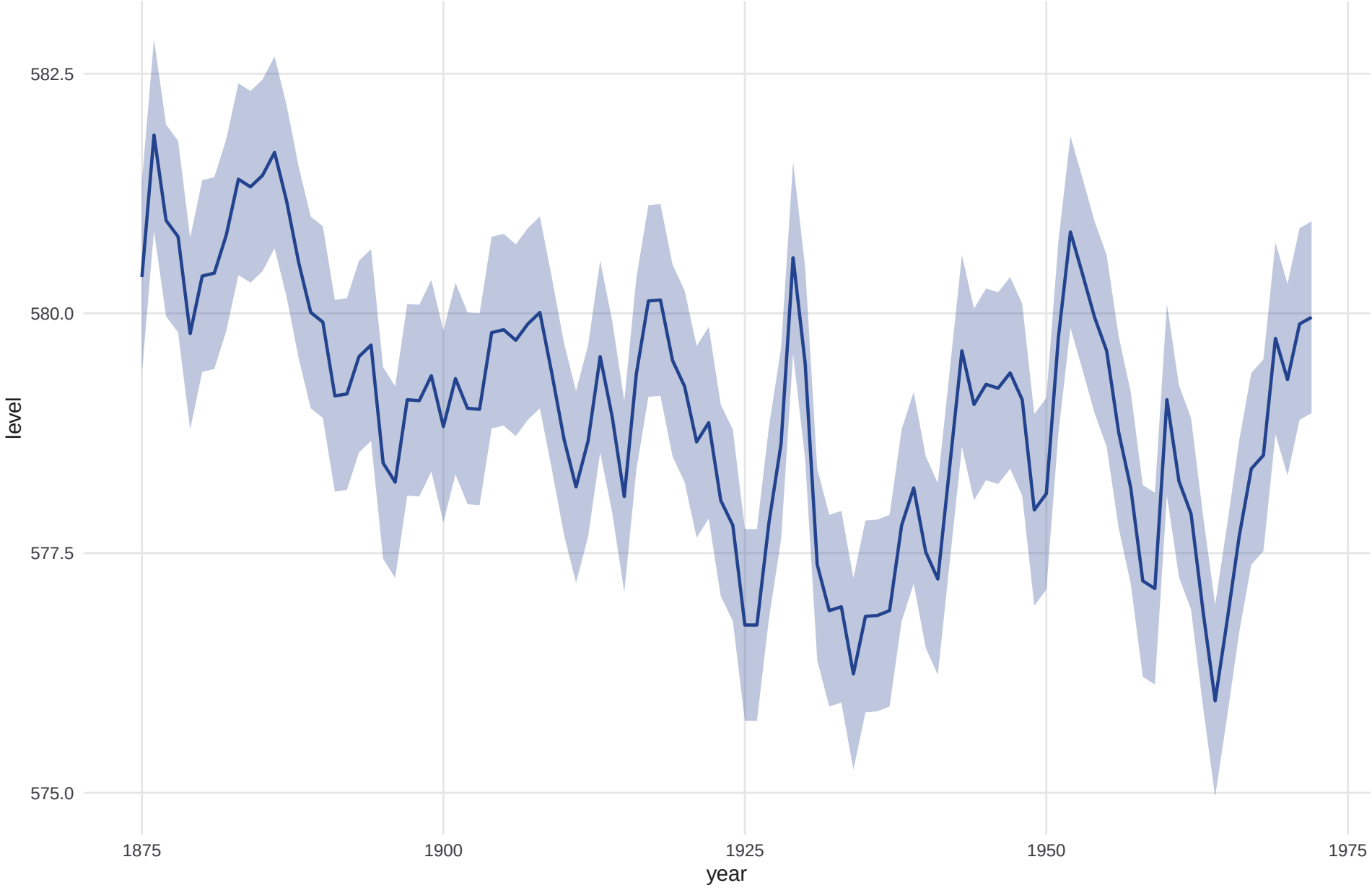

38. geom_density_2d − 2D Density Contours

Old Faithful eruptions vs waiting time

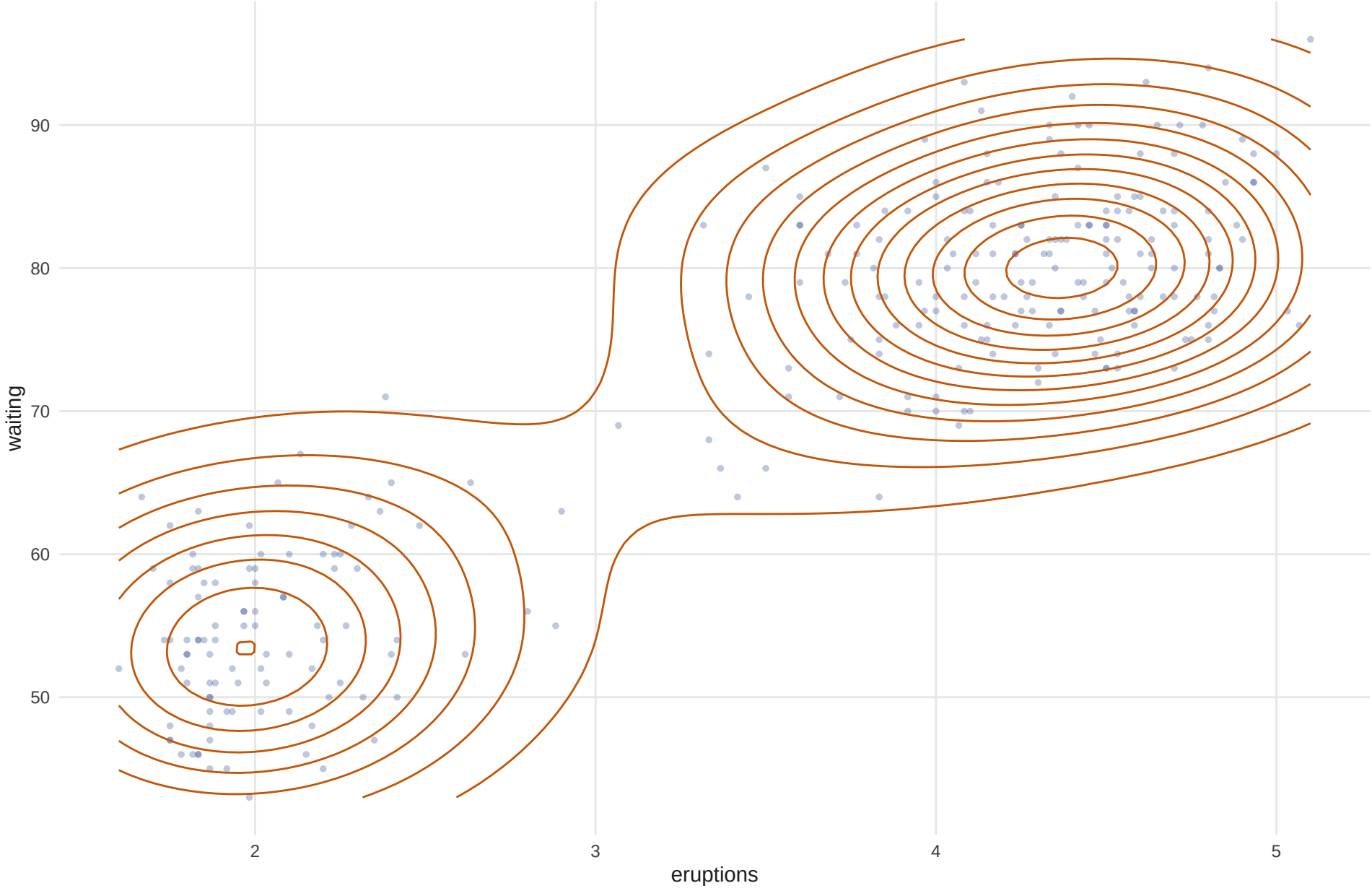

39. geom_density_2d_filled − Filled 2D Density

Color encodes density level

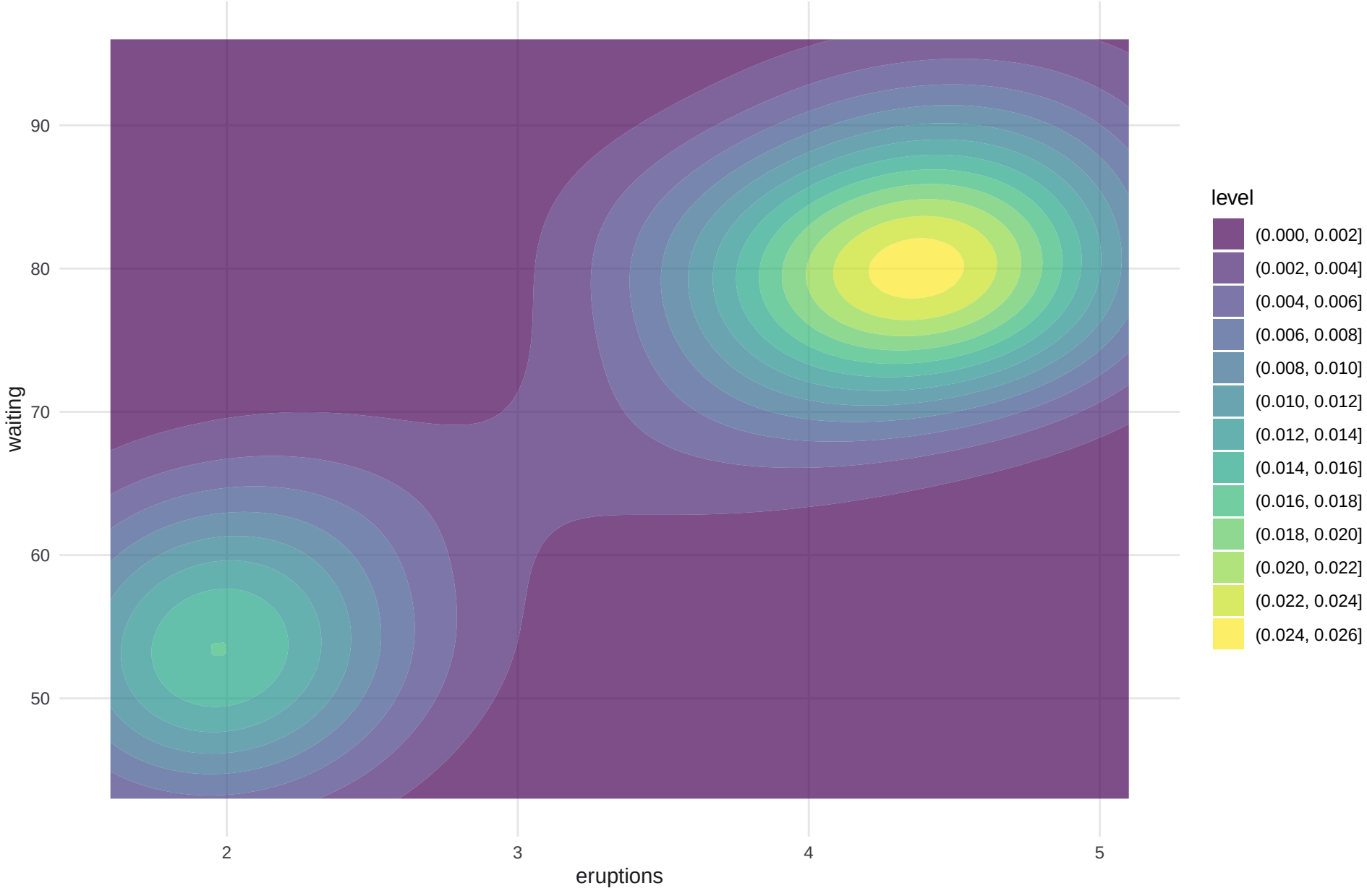

40. geom_contour − Contour Lines

Pre−computed bivariate normal density

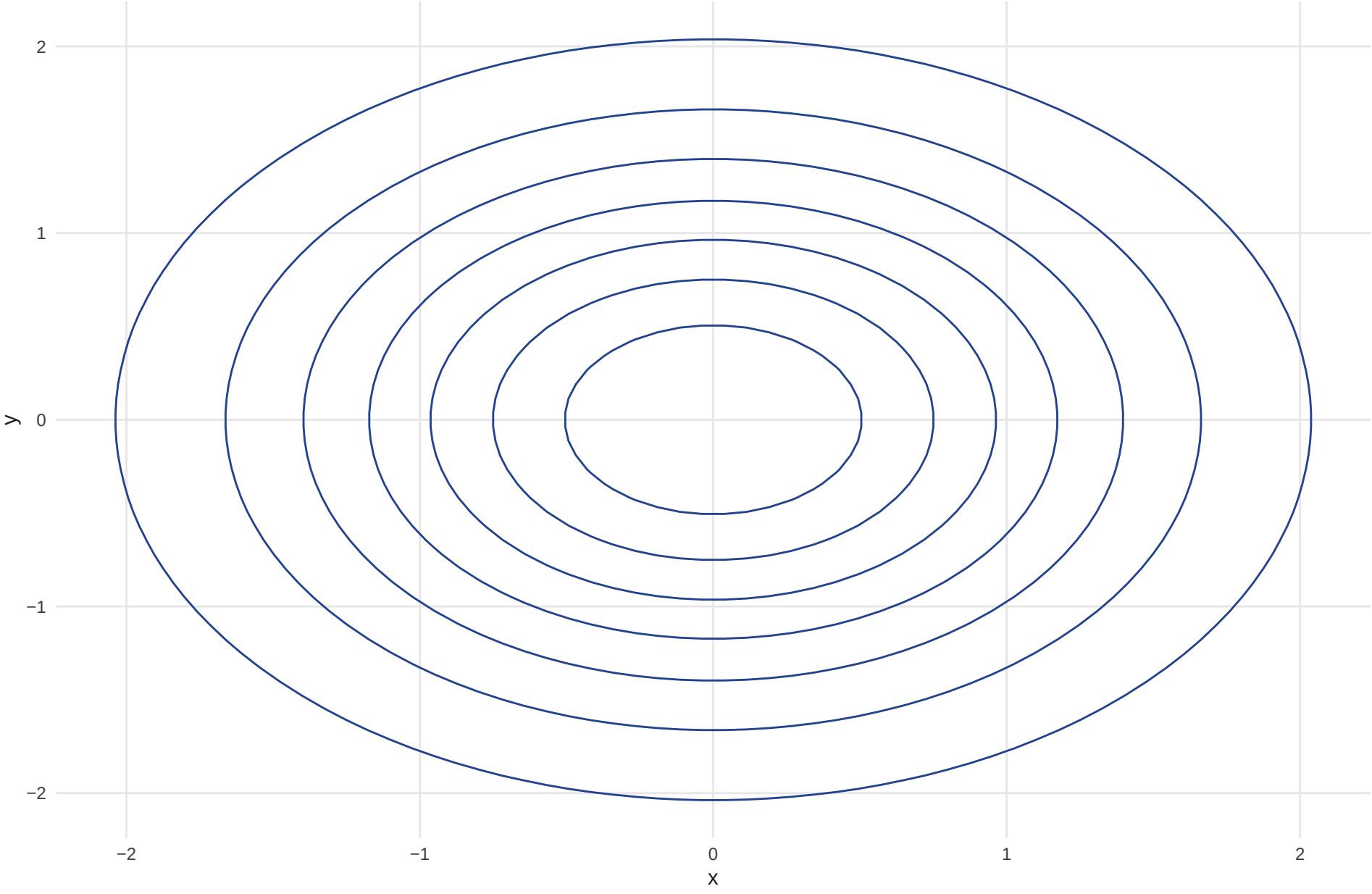

41. geom_contour_filled − Filled Contours

Filled regions between contour levels

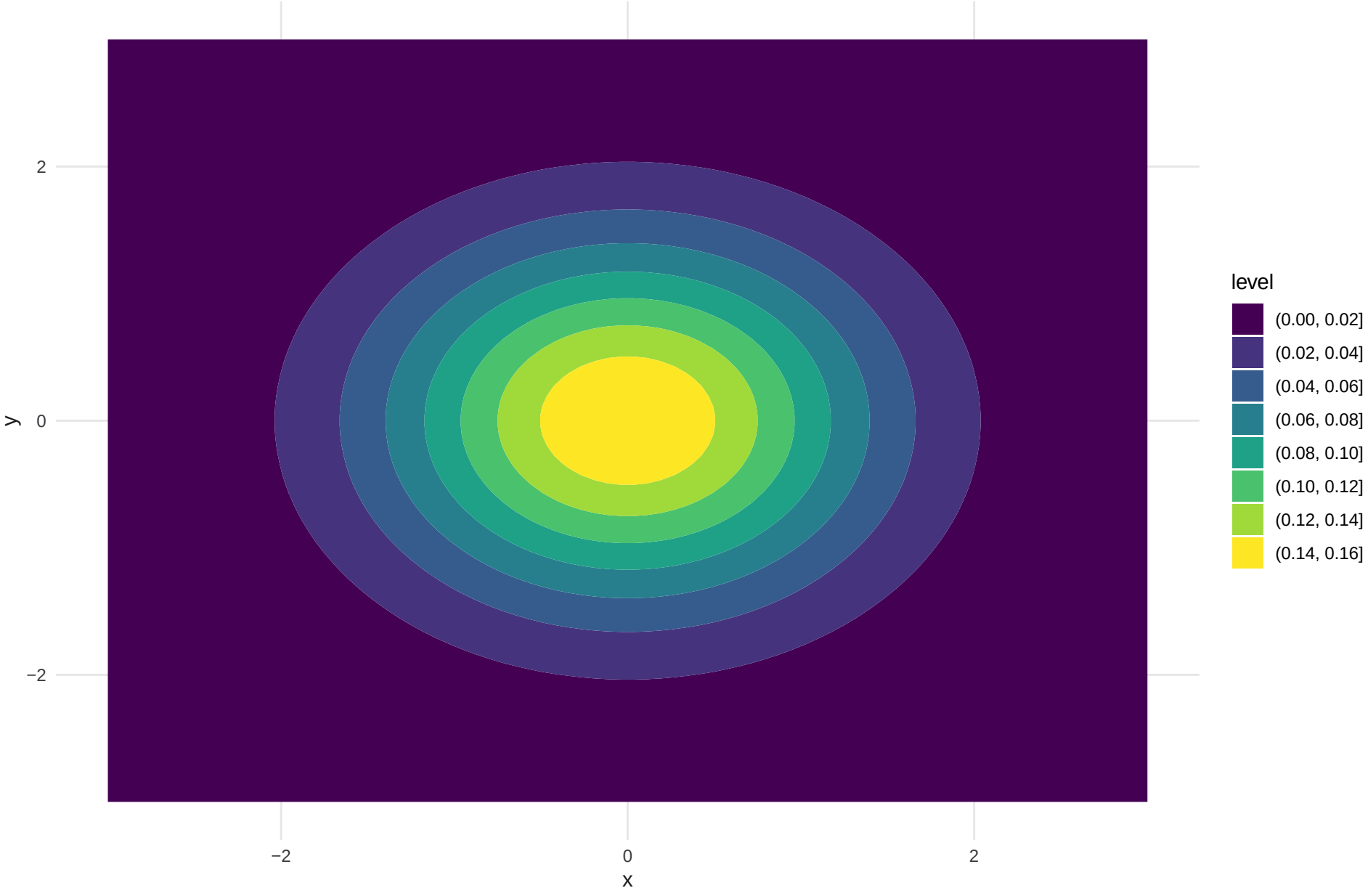

42. geom_bin_2d − 2D Rectangular Bins

Diamond carat vs price (53K observations)

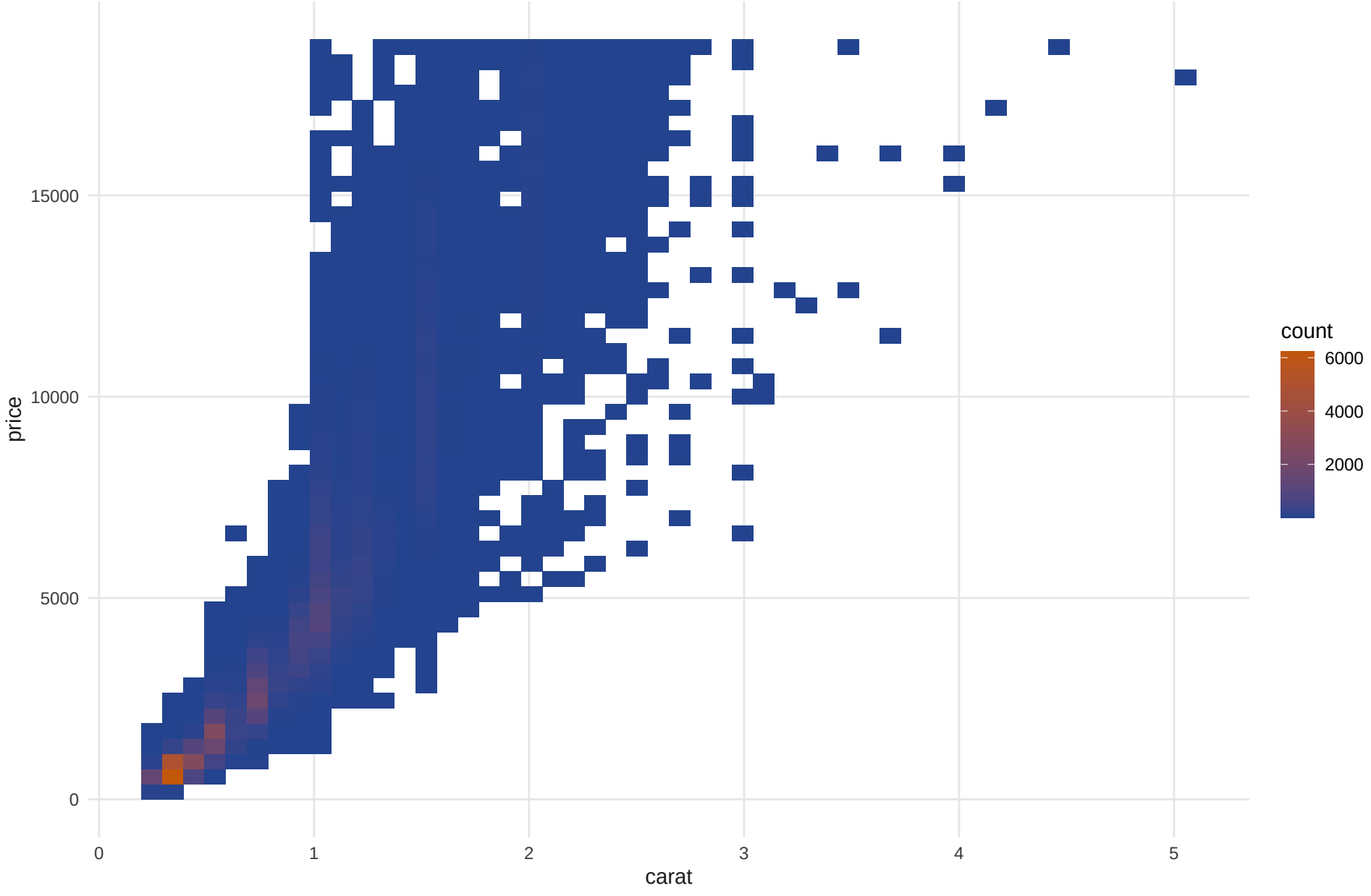

43. geom_hex − Hexagonal Bins

Beehive pattern binning

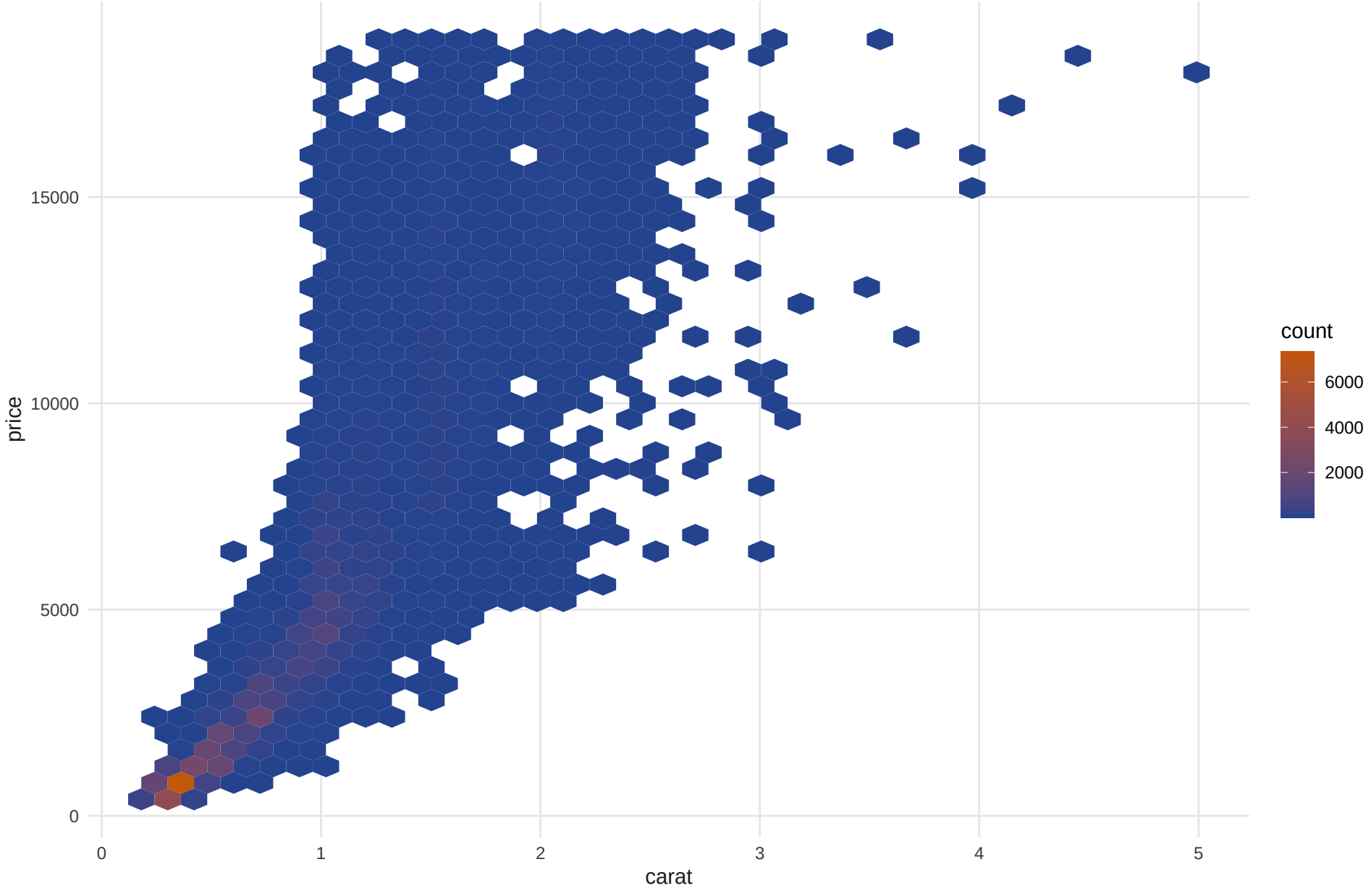

44. geom_raster − Smooth Raster

Bivariate normal with interpolate = TRUE

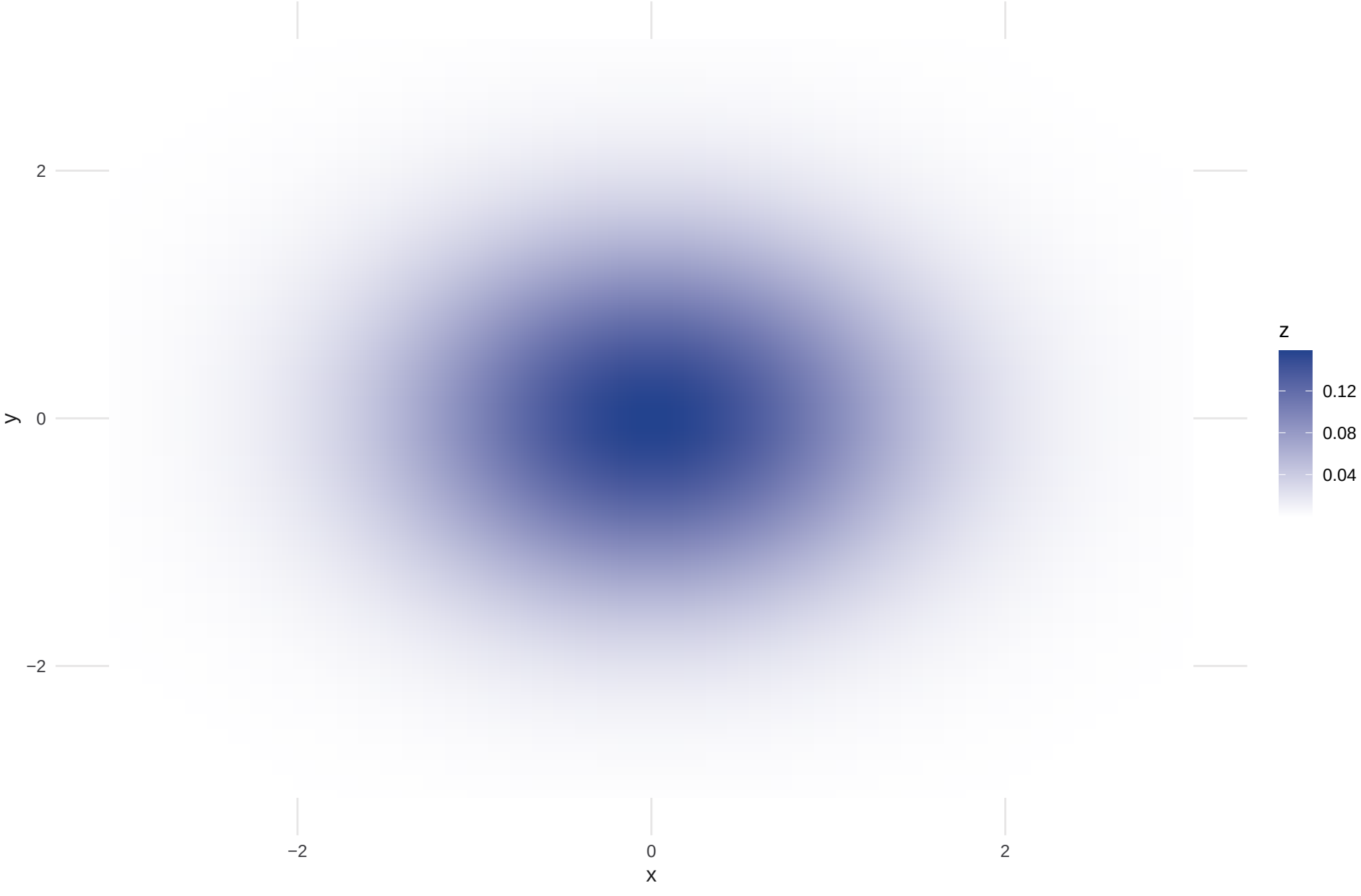

45. geom_map – Choropleth Map

Random values per US state

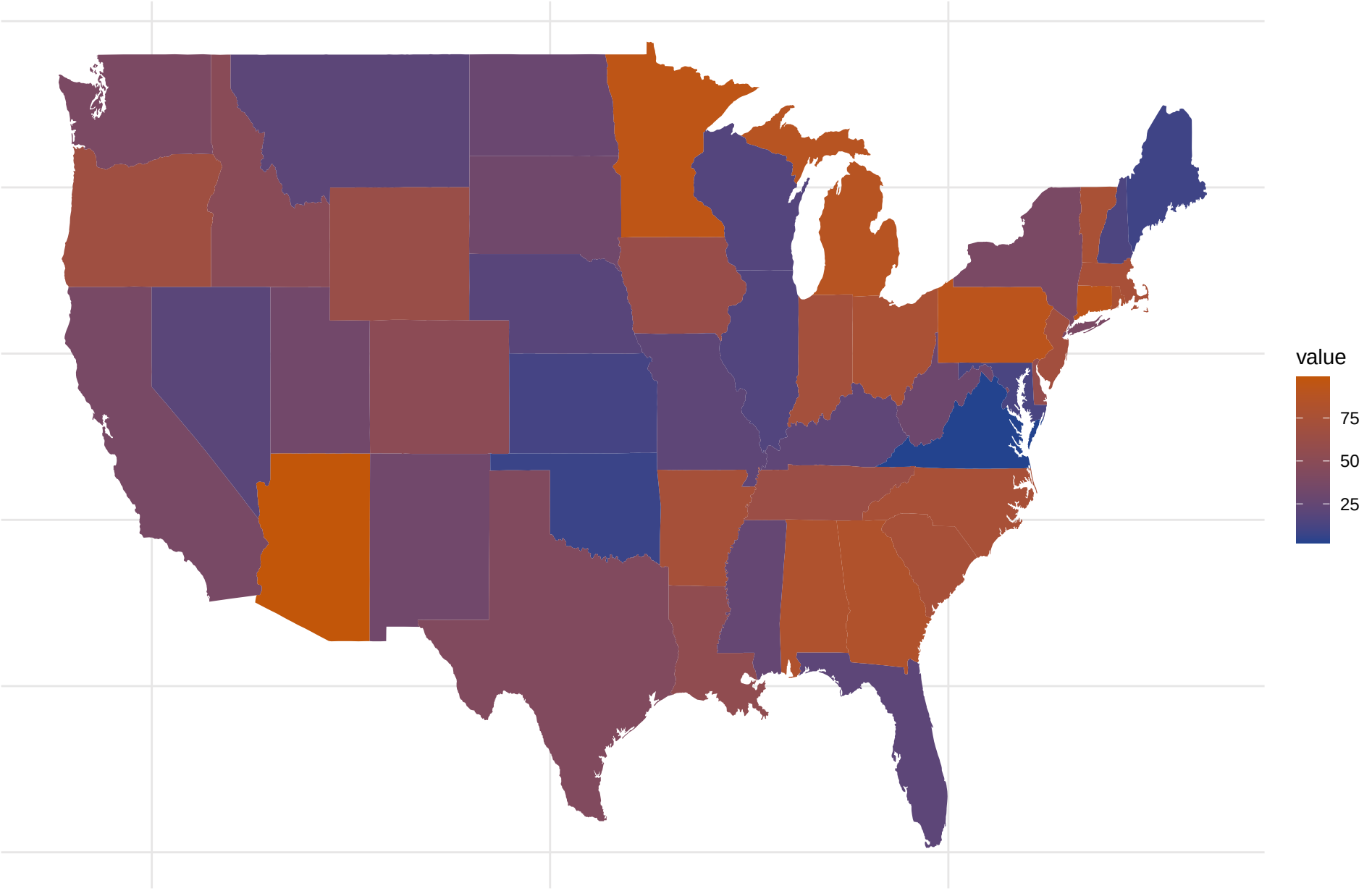

46. geom_polygon – US Map

States as filled polygons

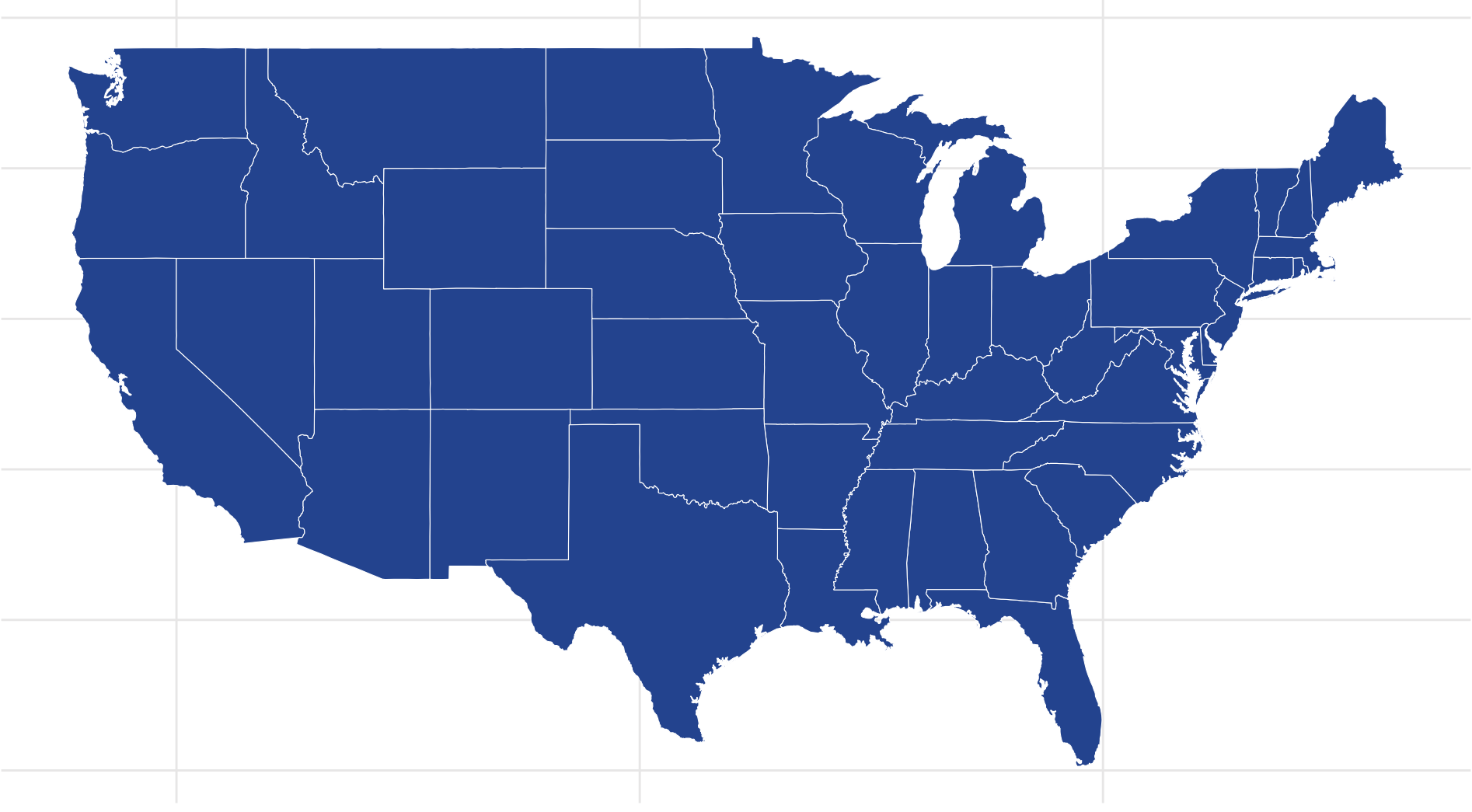

47. geom_sf − Simple Features Map

North Carolina counties by area

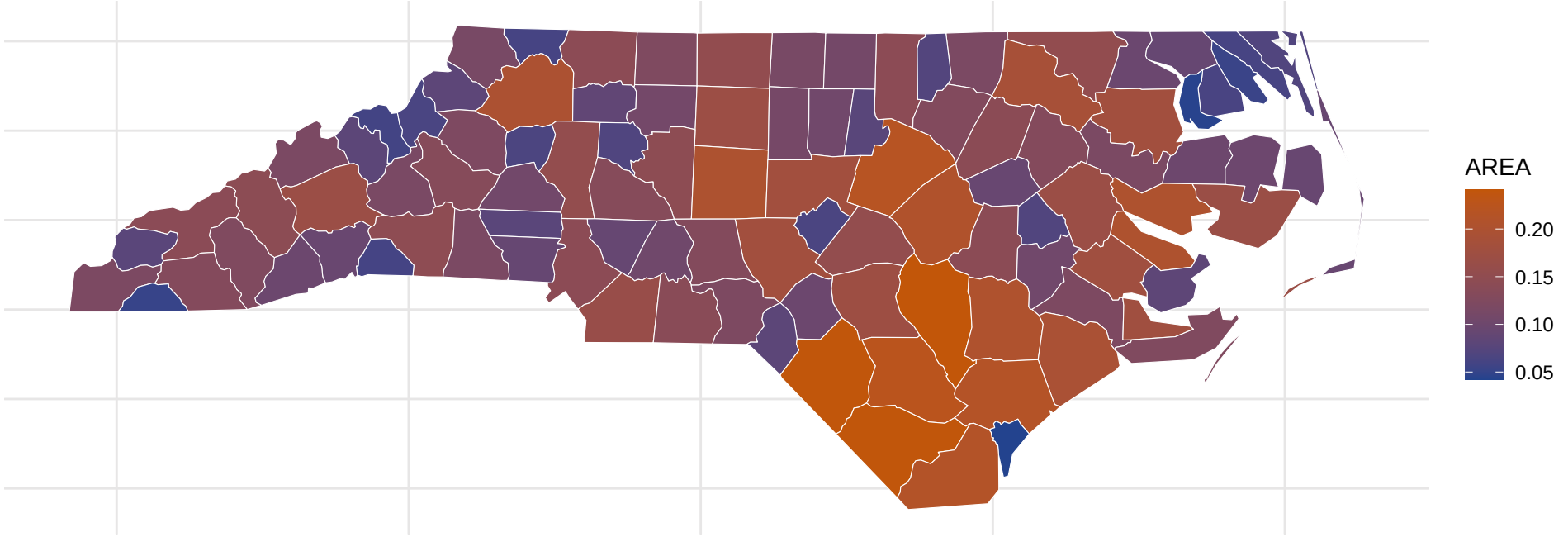

48. geom_sf_text − SF Map with Text

County names as plain text

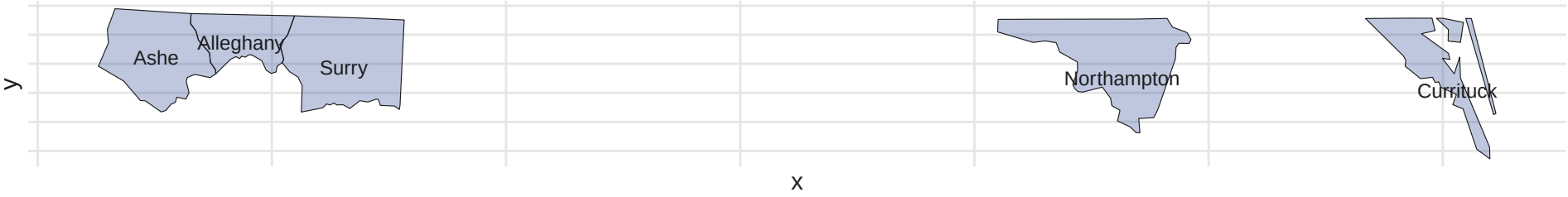

49. geom_sf_label − SF Map with Labels

County names in padded boxes

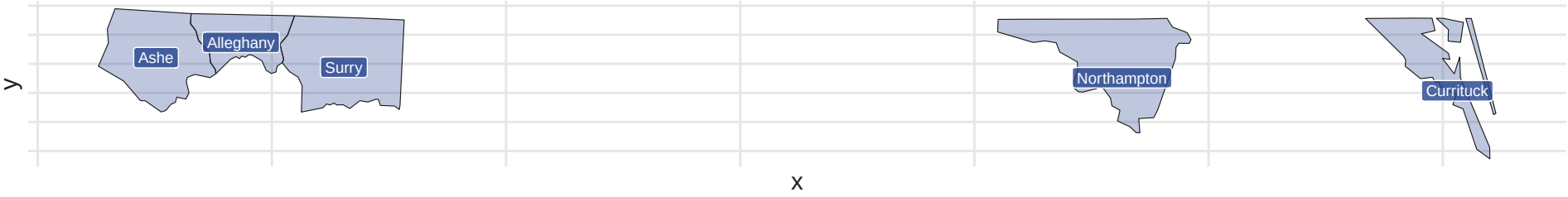

50−51. geom_qq + geom_qq_line − QQ Plot

t(5) sample vs normal theoretical quantiles

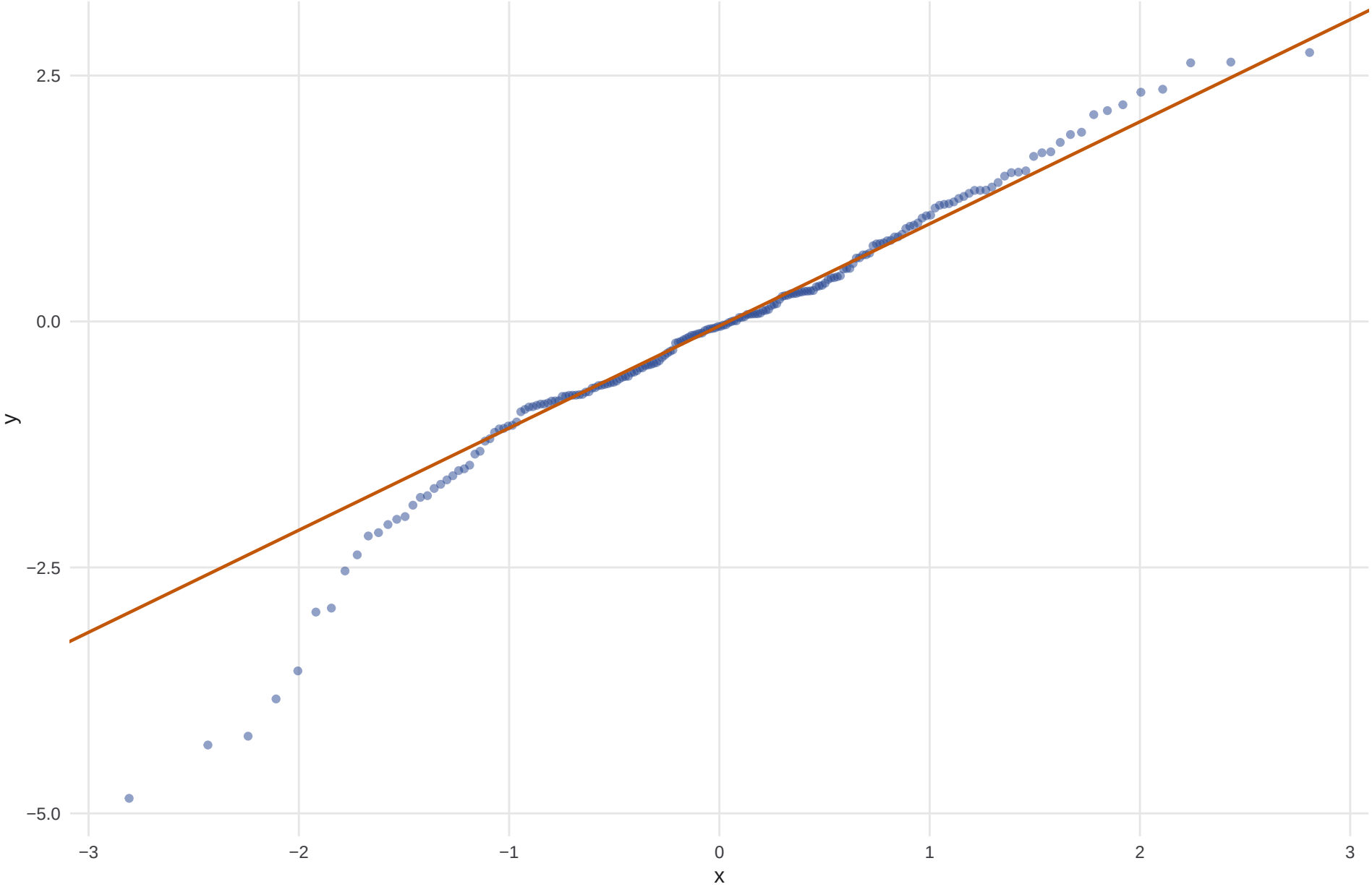

52. geom_function − Overlay Theoretical Distribution

Normal density over histogram of random draws

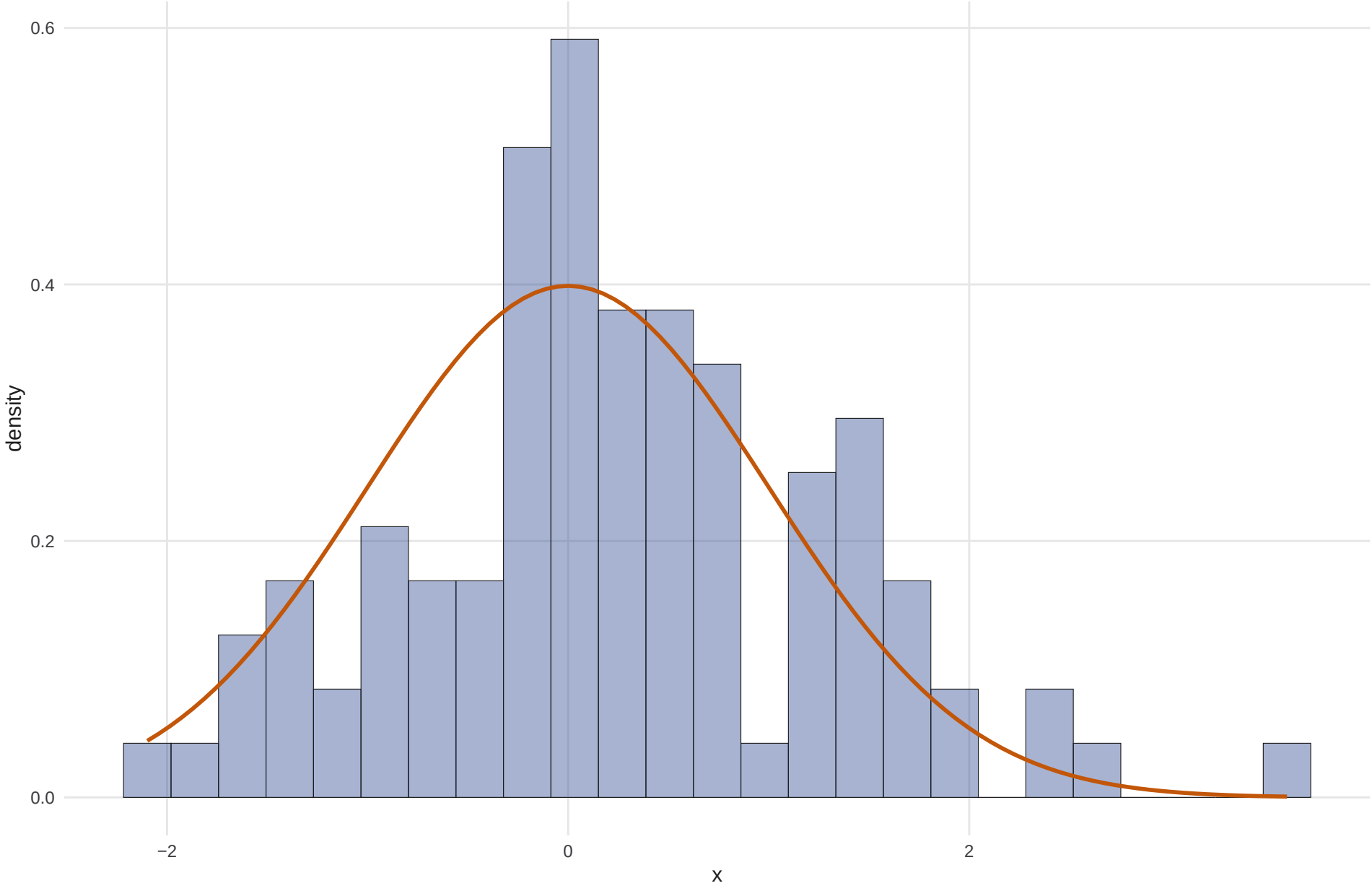

53. geom_blank − Empty Plot (Axis Limits Only)

Data mapped but nothing drawn; useful for layout prep

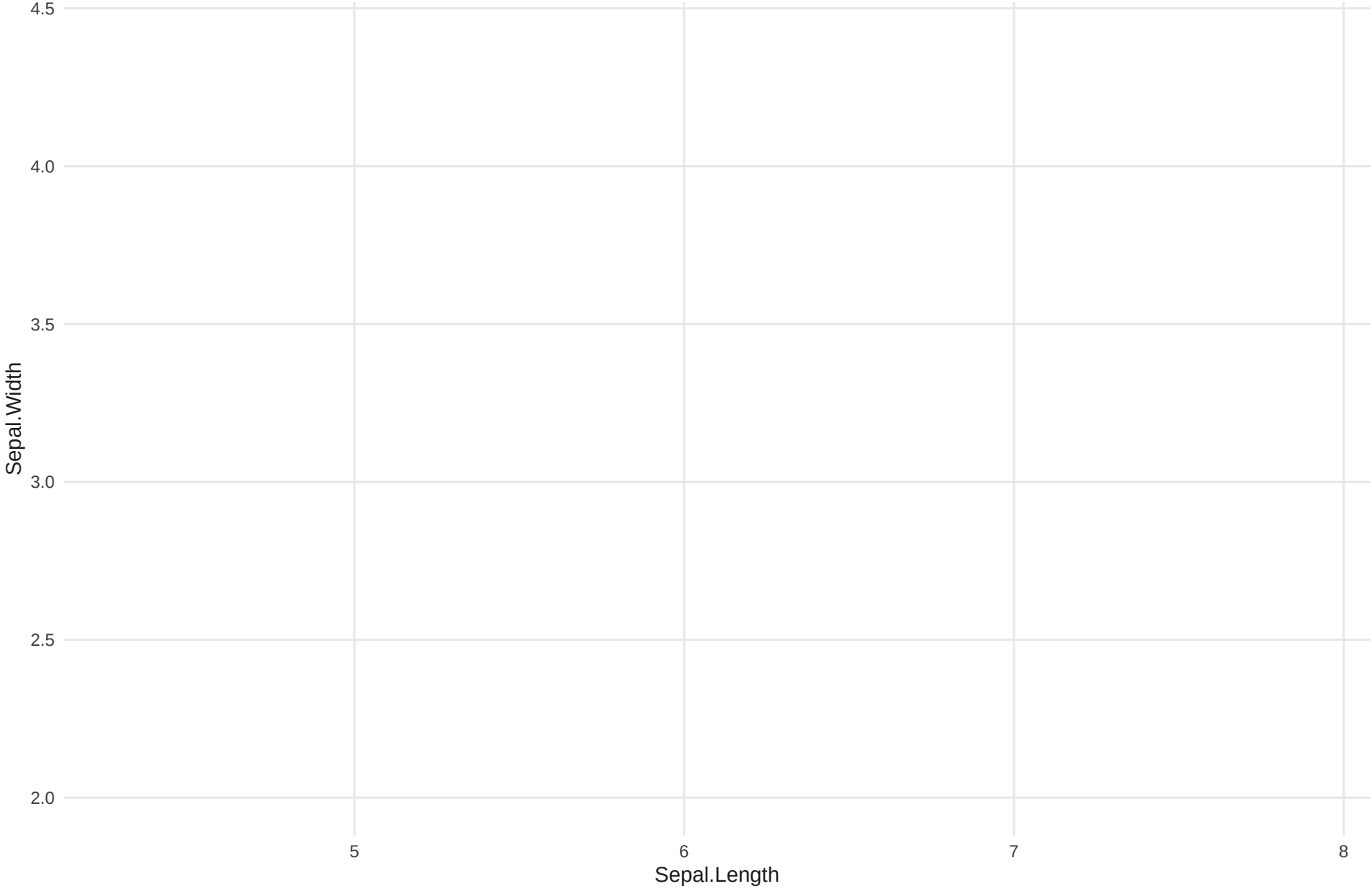

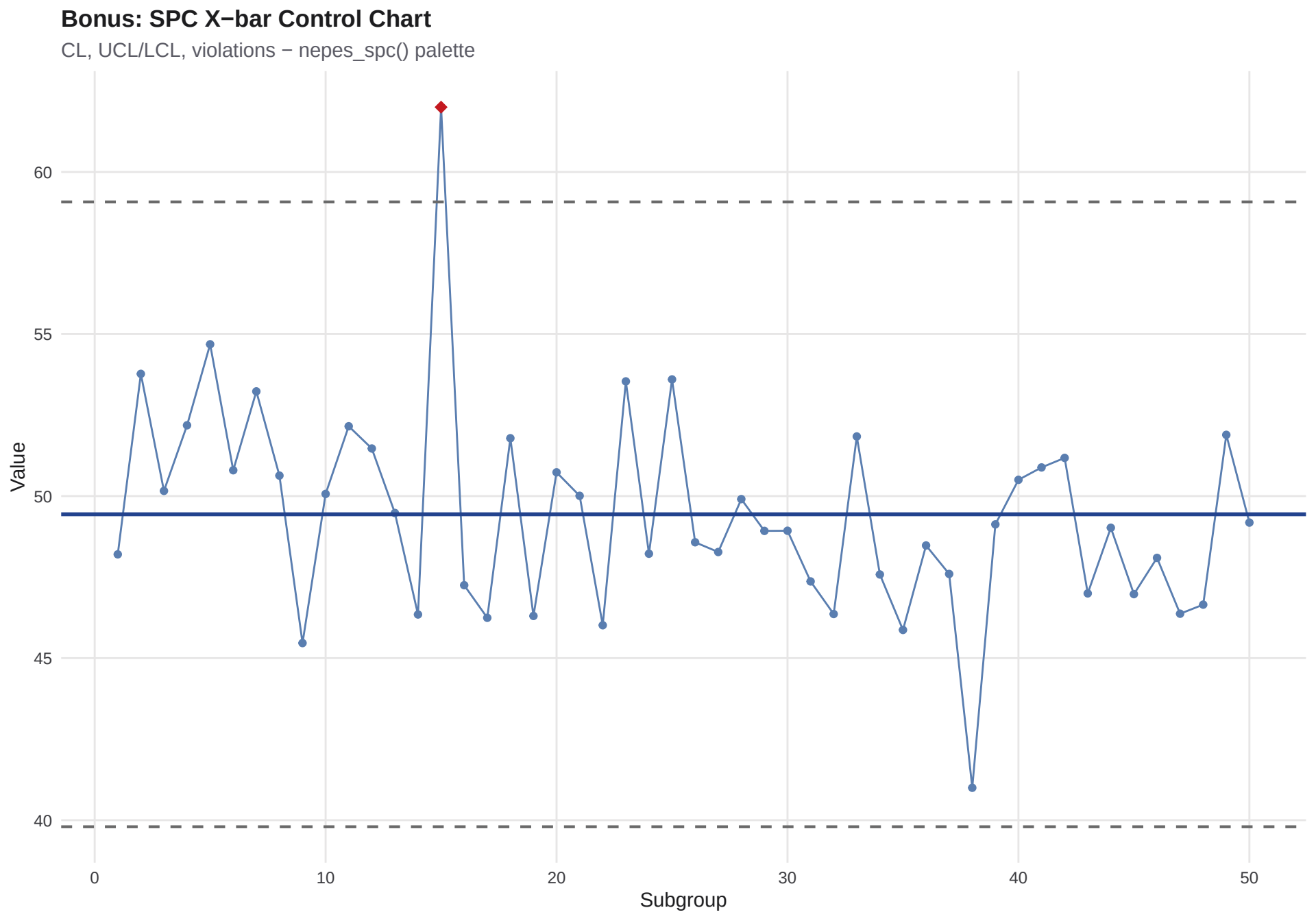
Bonus: SPC X−bar Control Chart
CL, UCL/LCL, violations − nepes_spc() palette
Value
60
55
50
45
40
0
10
20
30
40
50
Subgroup